SHEET 1 OF 11 SHEETS

A PORTION OF VESTING TENTATIVE TRACT NO. 16203

BLOCK 5157 MODULE 26

DATE OF SURVEY: JANUARY 1999

TRACT NO. 16234

IN THE UNINCORPORATED TERRITORY OF ORANGE COUNTY, CALIFORNIA

BEING A SUBDIVISION OF A PORTION OF PARCEL 1 OF LOT LINE ADJUSTMENT NO. LL 96-026 AS SHOWN ON EXHIBIT "B" ATTACHED TO THAT CERTAIN DOCUMENT RECORDED NOVEMBER 21, 1996 AS INSTRUMENT NO. 19960587414 OF OFFICIAL RECORDS, RECORDS OF ORANGE COUNTY, CALIFORNIA.

SEPTEMBER 2001

JAMES F. GILLEN, L.S. 5557

HUITT-ZOLLARS

9 NUMBERED LOTS AND 20 LETTERED LOTS 109.683 ACRES

ACCEPTED AND FILED AT THE REQUEST OF

FIRST AMERICAN TITLE INSURANCE COMPANY

DATE DECEMBER 26, 2001

TIME 10:22 A.M. FEE $27.00

INSTRUMENT NO. 20010940261

BOOK 825 PAGE 19-29 M/M

GARY L. GRANVILLE

COUNTY CLERK-RECORDER

BY _____ DEPUTY

OWNERSHIP CERTIFICATE:

WE, THE UNDERSIGNED, BEING ALL PARTIES HAVING ANY RECORD TITLE INTEREST IN THE LAND COVERED BY THIS MAP, DO HEREBY CONSENT TO THE PREPARATION AND RECORDATION OF SAID MAP, AS SHOWN WITHIN THE DISTINCTIVE BORDER LINE. WE ALSO HEREBY DEDICATE TO THE PUBLIC FOR STREET PURPOSES: CHARDONNAY DRIVE, VINEYARD DRIVE, DORRANCE DRIVE, AND FALABELLA DRIVE.

WE ALSO HEREBY DEDICATE TO THE COUNTY OF ORANGE:

(1) THE EASEMENTS FOR SIDEWALK PURPOSES AS SHOWN ON SAID MAP.

(2) THE EASEMENTS FOR STORM DRAIN PURPOSES AS SHOWN ON SAID MAP.

WE ALSO HEREBY DEDICATE TO THE COUNTY OF ORANGE EASEMENTS FOR PUBLIC PEDESTRIAN PURPOSES OVER LOTS H, I, AND J.

WE ALSO HEREBY DEDICATE TO THE COUNTY OF ORANGE AN EASEMENT OVER LOT 4 FOR PRIVATE LOCAL PARK PURPOSES, SUBJECT TO THE SAME TERMS AND CONDITIONS AS THAT CERTAIN DOCUMENT RECORDED OCTOBER 7, 1987 AS INSTRUMENT NO. 87-563594, OF OFFICIAL RECORDS, COUNTY OF ORANGE.

WE ALSO HEREBY RELEASE AND RELINQUISH TO THE COUNTY OF ORANGE ALL VEHICULAR ACCESS RIGHTS TO SIENNA PARKWAY, EXCEPT AT APPROVED ACCESS LOCATIONS.

DMB LADERA, L.L.C, A DELAWARE LIMITED LIABILITY COMPANY.

BY: RANCHO MISSION VIEJO, L.L.C., A DELAWARE LIMITED LIABILITY COMPANY, AS AGENT AND/OR MANAGER.

BY: _____ PRINT NAME: Paul Johnson PRINT TITLE: VP-Community Development

BY: _____ PRINT NAME: Stephen C. Schmuck PRINT TITLE: Exec VP - Development

DMB CONSOLIDATED HOLDINGS, L.L.C., AN ARIZONA LIMITED LIABILITY COMPANY, BENEFICIARY UNDER DEEDS OF TRUSTS RECORDED DECEMBER 10, 1996 AS INSTRUMENT NO. 19960624030, AND RECORDED APRIL 20, 1999 AS INSTRUMENT NO. 19990288616, BOTH OF OFFICIAL RECORDS.

BY: DMB ASSOCIATES, INC., AN ARIZONA CORPORATION, AS MANAGER.

BY: _____ PRINT NAME: TERRY D. RANDALL PRINT TITLE: VICE PRESIDENT

BY: _____ PRINT NAME: TIMOTHY A. KARNS PRINT TITLE: CHIEF FINANCIAL OFFICER

AUTOMATIC FIRE SPRINKLER NOTE:

ALL COMMERCIAL STRUCTURES GREATER THAN 6,000 SQUARE FEET; ALL MULTIFAMILY RESIDENTIAL STRUCTURES; ALL SINGLE-FAMILY STRUCTURES EXCEEDING 5,500 SQUARE FEET, AND ALL STRUCTURES EXCEEDING FIRE DEPARTMENT ACCESS REQUIREMENTS SHALL BE PROTECTED BY AN AUTOMATIC SPRINKLER SYSTEM.

SPECIAL FIRE PROTECTION NOTE:

PROPERTY IS TOTALLY EXCLUDED FROM A SPECIAL FIRE PROTECTION AREA.

HIGH FIRE HAZARD AREA NOTE:

THE LOTS SHOWN ON THIS MAP ARE IN A HIGH FIRE HAZARD AREA DUE TO WILD LAND EXPOSURE.

NOTE:

SEE SHEET 2 FOR NOTARY ACKNOWLEDGMENTS AND SIGNATURE OMISSIONS.

SURVEYOR'S STATEMENT:

I HEREBY STATE THAT THIS MAP CONSISTING OF 11 SHEETS, CORRECTLY REPRESENTS A TRUE AND COMPLETE SURVEY AS SHOWN MADE IN JANUARY, 1999; WAS MADE BY ME OR UNDER MY DIRECTION; THAT THE MONUMENTS ARE OF THE CHARACTER AND OCCUPY OR WILL OCCUPY THE POSITIONS INDICATED BY SAID MAP; AND THAT SAID MONUMENTS WILL BE SUFFICIENT TO ENABLE THE SURVEY TO BE RETRACED.

PROFESSIONAL LAND SURVEYOR JAMES F. GILLEN NO. 5557 EXP. 9/30/05 STATE OF CALIFORNIA

JAMES F. GILLEN
L.S. 5557
EXPIRATION DATE: 9/30/05

COUNTY SURVEYOR'S STATEMENT:

I HEREBY STATE THAT I HAVE EXAMINED THIS MAP AND HAVE FOUND IT TO BE SUBSTANTIALLY IN CONFORMANCE WITH THE TENTATIVE MAP AS FILED WITH, AMENDED AND APPROVED BY THE ORANGE COUNTY SUBDIVISION COMMITTEE; THAT ALL PROVISIONS OF THE SUBDIVISION MAP ACT AND COUNTY SUBDIVISION REGULATIONS HAVE BEEN COMPLIED WITH AND I AM SATISFIED SAID MAP IS TECHNICALLY CORRECT.

DATED THIS 5TH DAY OF DECEMBER, 2001.

JOHN CANAS, COUNTY SURVEYOR
LS 4408 EXPIRATION DATE: 09-30-05

LICENSED LAND SURVEYOR JOHN CANAS EXP. 9/30/05 No. 4408 STATE OF CALIFORNIA

COUNTY TREASURER-TAX COLLECTOR'S CERTIFICATE:

STATE OF CALIFORNIA)
COUNTY OF ORANGE) SS

I HEREBY CERTIFY THAT ACCORDING TO THE RECORDS OF MY OFFICE THERE ARE NO LIENS AGAINST THE LAND COVERED BY THIS MAP OR ANY PART THEREOF FOR UNPAID STATE, COUNTY, MUNICIPAL OR LOCAL TAXES OR SPECIAL ASSESSMENTS COLLECTED AS TAXES, ~~EXCEPT TAXES OR SPECIAL ASSESSMENTS COLLECTED AS TAXES NOT YET PAYABLE.~~

~~AND DO ALSO HEREBY CERTIFY TO THE RECORDER OF ORANGE COUNTY THAT THE PROVISIONS OF THE SUBDIVISION MAP ACT HAVE BEEN COMPLIED WITH REGARDING DEPOSITS TO SECURE THE PAYMENT OF TAXES OR SPECIAL ASSESSMENTS COLLECTED AS TAXES ON THE LAND COVERED BY THIS MAP.~~

DATED THIS 14 DAY OF November, 2001.

JOHN M.W. MOORLACH
COUNTY TREASURER-TAX COLLECTOR

BY: _____ DEPUTY TREASURER-TAX COLLECTOR

CLERK OF THE BOARD OF SUPERVISORS' CERTIFICATE:

STATE OF CALIFORNIA)
COUNTY OF ORANGE) SS

I HEREBY CERTIFY THAT THIS MAP WAS PRESENTED FOR APPROVAL TO THE BOARD OF SUPERVISORS OF ORANGE COUNTY AT A REGULAR MEETING THEREOF HELD ON THE 18 DAY OF December 2001, AND THAT THEREUPON SAID BOARD DID, BY AN ORDER DULY PASSED AND ENTERED, APPROVE SAID MAP AND DID ACCEPT ON BEHALF OF THE PUBLIC, SUBJECT TO IMPROVEMENTS: THE DEDICATION FOR STREET PURPOSES OF : CHARDONNAY DRIVE, VINEYARD DRIVE, DORRANCE DRIVE, AND FALABELLA DRIVE.

AND DID ALSO ACCEPT ON BEHALF OF THE COUNTY OF ORANGE:

1. THE EASEMENTS FOR SIDEWALK PURPOSES AS DEDICATED.

2. THE EASEMENTS FOR STORM DRAIN PURPOSES AS DEDICATED.

3. THE EASEMENTS FOR PUBLIC PEDESTRIAN PURPOSES AS DEDICATED.

AND DID ACCEPT THE EASEMENT OVER LOT 4 FOR PRIVATE LOCAL PARK PURPOSES AS DEDICATED.

AND DID ALSO ACCEPT ON BEHALF OF THE COUNTY OF ORANGE THE VEHICULAR ACCESS RIGHTS TO SIENNA PARKWAY AS RELEASED AND RELINQUISHED.

DATED THIS 18 DAY OF December, 2001.

DARLENE J. BLOOM
CLERK OF THE BOARD OF SUPERVISORS

BOARD OF SUPERVISORS ORANGE COUNTY, CALIFORNIA

G:\10036745\TM\TR16234\TM162341.DWG

10-0367-45 1

SHEET 2 OF 11 SHEETS

TRACT NO. 16234

A PORTION OF VESTING TENTATIVE TRACT NO. 16203

IN THE UNINCORPORATED TERRITORY OF ORANGE COUNTY, CALIFORNIA

DATE OF SURVEY: JANUARY 1999

SEPTEMBER 2001 JAMES F. GILLEN, L.S. 5557

HUITT-ZOLLARS

9 NUMBERED LOTS AND 20 LETTERED LOTS 109.683 ACRES

DMB LADERA, L.L.C.

STATE OF CALIFORNIA)
)SS
COUNTY OF ORANGE)

ON THIS 22nd DAY OF October, 2001, BEFORE ME, Tina T. Baker, A NOTARY PUBLIC IN AND FOR SAID STATE, PERSONALLY APPEARED Paul Johnson AND Stephen C. Schroeck, PERSONALLY KNOWN TO ME ~~OR PROVED TO~~ ME ~~ON THE BASIS OF SATISFACTORY EVIDENCE~~ TO BE THE PERSONS WHOSE NAMES ARE SUBSCRIBED TO THE WITHIN INSTRUMENT AND ACKNOWLEDGED TO ME THAT THEY EXECUTED THE SAME IN THEIR AUTHORIZED CAPACITIES, AND THAT BY THEIR SIGNATURES ON THE INSTRUMENT THE PERSONS, OR THE ENTITY UPON BEHALF OF WHICH THE PERSONS ACTED, EXECUTED THE INSTRUMENT.

WITNESS MY HAND: Tina T. Baker
NOTARY PUBLIC IN AND FOR SAID STATE

MY COMMISSION EXPIRES 8/25/04

MY PRINCIPAL PLACE OF BUSINESS IS IN Orange COUNTY.

Tina T. Baker
PRINT NAME

DMB CONSOLIDATED HOLDINGS, L.L.C.

STATE OF ARIZONA)
)SS
COUNTY OF MARICOPA)

ON THIS 23rd DAY OF October, 2001, BEFORE ME, Carolynn Sneddon, A NOTARY PUBLIC IN AND FOR SAID STATE, PERSONALLY APPEARED Terry D. Randall AND Timothy A. Keehr, PERSONALLY KNOWN TO ME OR PROVED TO ME ON THE BASIS OF SATISFACTORY EVIDENCE TO BE THE PERSONS WHOSE NAMES ARE SUBSCRIBED TO THE WITHIN INSTRUMENT AND ACKNOWLEDGED TO ME THAT THEY EXECUTED THE SAME IN THEIR AUTHORIZED CAPACITIES, AND THAT BY THEIR SIGNATURES ON THE INSTRUMENT THE PERSONS, OR THE ENTITY UPON BEHALF OF WHICH THE PERSONS ACTED, EXECUTED THE INSTRUMENT.

WITNESS MY HAND: Carolynn Sneddon
NOTARY PUBLIC IN AND FOR SAID STATE

MY COMMISSION EXPIRES 07/14/02

MY PRINCIPAL PLACE OF BUSINESS IS IN Maricopa COUNTY.

Carolynn Sneddon
PRINT NAME

SIGNATURE OMISSIONS:

IN ACCORDANCE WITH THE PROVISIONS OF SECTION 66436(a) (3) OF THE SUBDIVISION MAP ACT, THE FOLLOWING SIGNATURES HAVE BEEN OMITTED:

1. SAN DIEGO GAS & ELECTRIC COMPANY, HOLDER OF AN EASEMENT FOR PUBLIC UTILITIES AND INCIDENTAL PURPOSES RECORDED JANUARY 9, 2001 AS INSTRUMENT NO. 20010014545 OF OFFICIAL RECORDS.
2. LADERA DEVELOPMENT COMPANY, L.L.C. , HOLDER OF OIL, GAS, MINERAL, AND WATER RIGHTS RECORDED DECEMBER 10, 1996 AS INSTRUMENT NO. 19960624029 OF OFFICIAL RECORDS.

EASEMENT NOTES:

(A) INDICATES A UTILITY EASEMENT TO SAN DIEGO GAS AND ELECTRIC COMPANY PER INSTRUMENT NO. 20010014545, O.R.

(B) INDICATES SIDEWALK EASEMENT DEDICATED TO THE COUNTY OF ORANGE.

(C) INDICATES STORM DRAIN EASEMENT DEDICATED TO THE COUNTY OF ORANGE.

(D) INDICATES EASEMENT FOR PUBLIC PEDESTRIAN PURPOSES DEDICATED TO THE COUNTY OF ORANGE.

(E) INDICATES EASEMENT FOR PRIVATE LOCAL PARK PURPOSES DEDICATED TO THE COUNTY OF ORANGE.

SHEET 3 OF 11 SHEETS

A PORTION OF VESTING TENTATIVE TRACT NO. 16203

DATE OF SURVEY: JANUARY 1999

TRACT NO. 16234

IN THE UNINCORPORATED TERRITORY OF ORANGE COUNTY, CALIFORNIA

SEPTEMBER 2001 JAMES F. GILLEN, L.S. 5557

HUITT-ZOLLARS

9 NUMBERED LOTS AND 20 LETTERED LOTS 109.683 ACRES

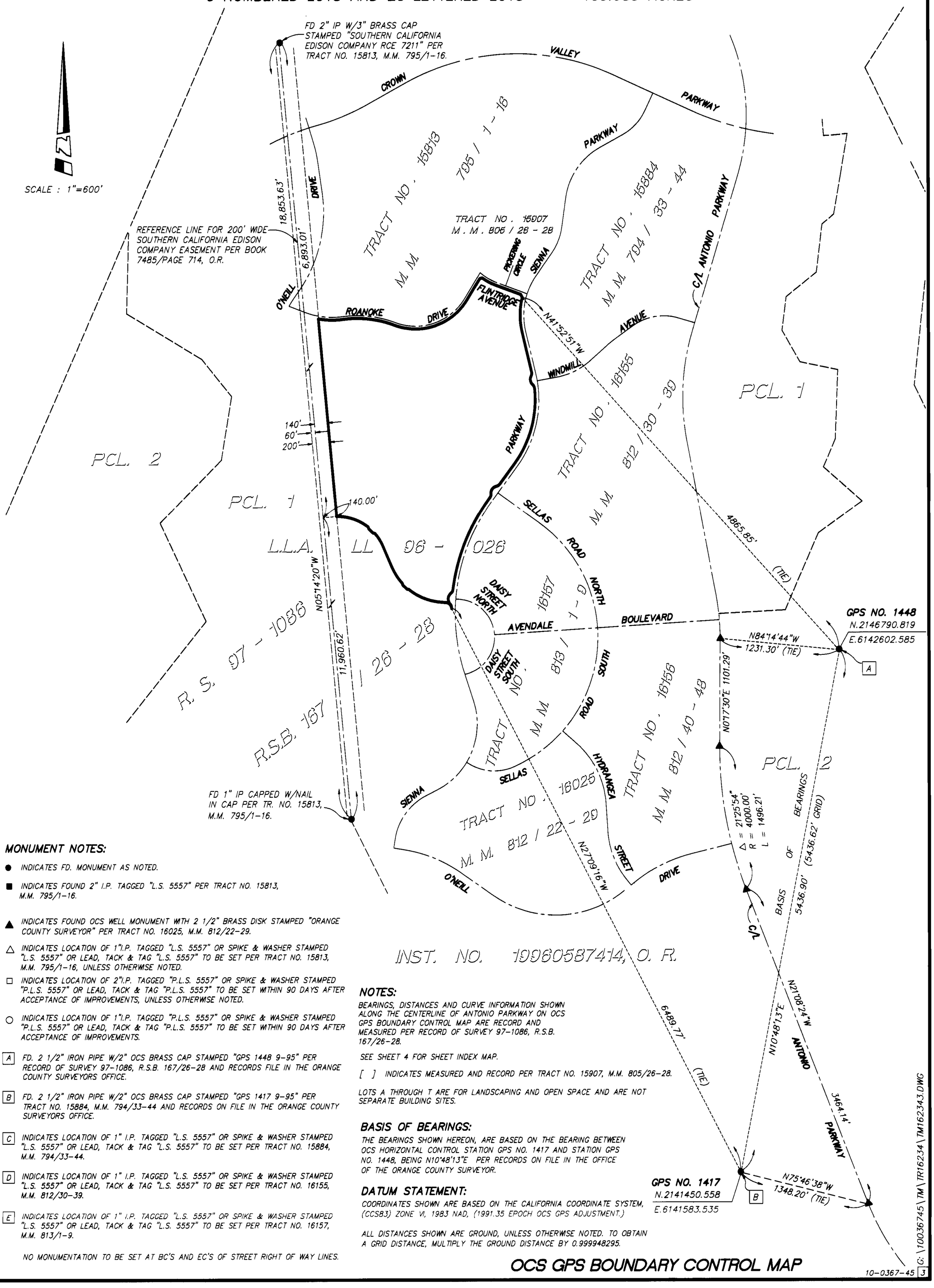

MONUMENT NOTES:

- ● INDICATES FD. MONUMENT AS NOTED.
- ■ INDICATES FOUND 2" I.P. TAGGED "L.S. 5557" PER TRACT NO. 15813, M.M. 795/1-16.
- ▲ INDICATES FOUND OCS WELL MONUMENT WITH 2 1/2" BRASS DISK STAMPED "ORANGE COUNTY SURVEYOR" PER TRACT NO. 16025, M.M. 812/22-29.
- △ INDICATES LOCATION OF 1"I.P. TAGGED "L.S. 5557" OR SPIKE & WASHER STAMPED "L.S. 5557" OR LEAD, TACK & TAG "L.S. 5557" TO BE SET PER TRACT NO. 15813, M.M. 795/1-16, UNLESS OTHERWISE NOTED.
- □ INDICATES LOCATION OF 2"I.P. TAGGED "P.L.S. 5557" OR SPIKE & WASHER STAMPED "P.L.S. 5557" OR LEAD, TACK & TAG "P.L.S. 5557" TO BE SET WITHIN 90 DAYS AFTER ACCEPTANCE OF IMPROVEMENTS, UNLESS OTHERWISE NOTED.
- ○ INDICATES LOCATION OF 1"I.P. TAGGED "P.L.S. 5557" OR SPIKE & WASHER STAMPED "P.L.S. 5557" OR LEAD, TACK & TAG "P.L.S. 5557" TO BE SET WITHIN 90 DAYS AFTER ACCEPTANCE OF IMPROVEMENTS.

[A] FD. 2 1/2" IRON PIPE W/2" OCS BRASS CAP STAMPED "GPS 1448 9-95" PER RECORD OF SURVEY 97-1086, R.S.B. 167/26-28 AND RECORDS FILE IN THE ORANGE COUNTY SURVEYORS OFFICE.

[B] FD. 2 1/2" IRON PIPE W/2" OCS BRASS CAP STAMPED "GPS 1417 9-95" PER TRACT NO. 15884, M.M. 794/33-44 AND RECORDS ON FILE IN THE ORANGE COUNTY SURVEYORS OFFICE.

[C] INDICATES LOCATION OF 1" I.P. TAGGED "L.S. 5557" OR SPIKE & WASHER STAMPED "L.S. 5557" OR LEAD, TACK & TAG "L.S. 5557" TO BE SET PER TRACT NO. 15884, M.M. 794/33-44.

[D] INDICATES LOCATION OF 1" I.P. TAGGED "L.S. 5557" OR SPIKE & WASHER STAMPED "L.S. 5557" OR LEAD, TACK & TAG "L.S. 5557" TO BE SET PER TRACT NO. 16155, M.M. 812/30-39.

[E] INDICATES LOCATION OF 1" I.P. TAGGED "L.S. 5557" OR SPIKE & WASHER STAMPED "L.S. 5557" OR LEAD, TACK & TAG "L.S. 5557" TO BE SET PER TRACT NO. 16157, M.M. 813/1-9.

NO MONUMENTATION TO BE SET AT BC'S AND EC'S OF STREET RIGHT OF WAY LINES.

NOTES:

BEARINGS, DISTANCES AND CURVE INFORMATION SHOWN ALONG THE CENTERLINE OF ANTONIO PARKWAY ON OCS GPS BOUNDARY CONTROL MAP ARE RECORD AND MEASURED PER RECORD OF SURVEY 97-1086, R.S.B. 167/26-28.

SEE SHEET 4 FOR SHEET INDEX MAP.

[ ] INDICATES MEASURED AND RECORD PER TRACT NO. 15907, M.M. 805/26-28.

LOTS A THROUGH T ARE FOR LANDSCAPING AND OPEN SPACE AND ARE NOT SEPARATE BUILDING SITES.

BASIS OF BEARINGS:

THE BEARINGS SHOWN HEREON, ARE BASED ON THE BEARING BETWEEN OCS HORIZONTAL CONTROL STATION GPS NO. 1417 AND STATION GPS NO. 1448, BEING N10°48'13"E PER RECORDS ON FILE IN THE OFFICE OF THE ORANGE COUNTY SURVEYOR.

DATUM STATEMENT:

COORDINATES SHOWN ARE BASED ON THE CALIFORNIA COORDINATE SYSTEM, (CCS83) ZONE VI, 1983 NAD, (1991.35 EPOCH OCS GPS ADJUSTMENT.)

ALL DISTANCES SHOWN ARE GROUND, UNLESS OTHERWISE NOTED. TO OBTAIN A GRID DISTANCE, MULTIPLY THE GROUND DISTANCE BY 0.999948295.

OCS GPS BOUNDARY CONTROL MAP

SHEET 4 OF 11 SHEETS

A PORTION OF VESTING
TENTATIVE TRACT NO. 16203

DATE OF SURVEY:
JANUARY 1999

TRACT NO. 16234

IN THE UNINCORPORATED TERRITORY OF ORANGE COUNTY, CALIFORNIA

SEPTEMBER 2001 JAMES F. GILLEN, L.S. 5557

HUITT-ZOLLARS

9 NUMBERED LOTS AND 20 LETTERED LOTS 109.683 ACRES

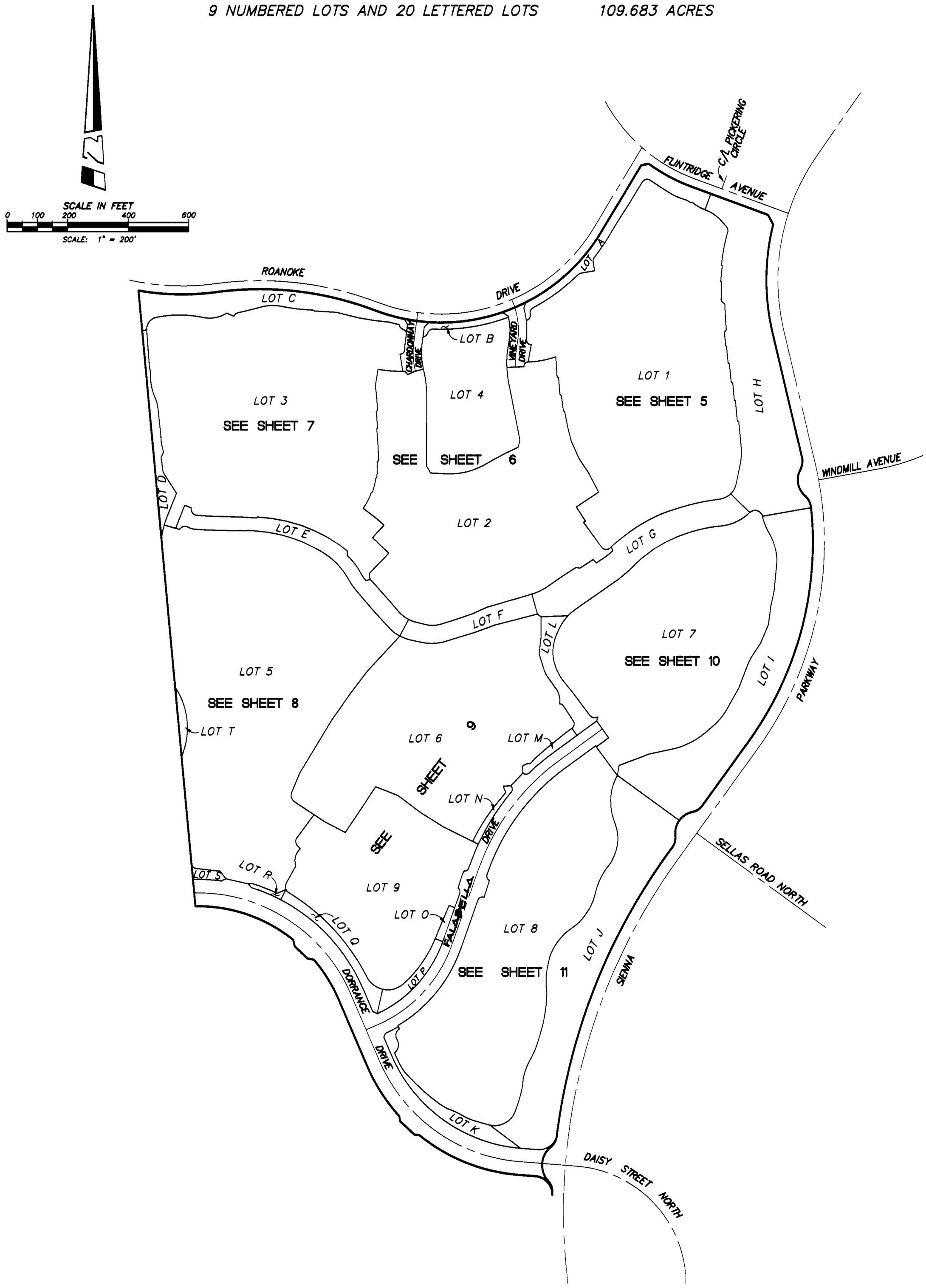

SHEET INDEX MAP

G:\10036745\TM\TR16234\TM162344.DWG

10-0367-45 4

SHEET 5 OF 11 SHEETS

A PORTION OF VESTING TENTATIVE TRACT NO. 16203

DATE OF SURVEY: JANUARY 1999

TRACT NO. 16234

IN THE UNINCORPORATED TERRITORY OF ORANGE COUNTY, CALIFORNIA

SEPTEMBER 2001 JAMES F. GILLEN, L.S. 5557

HUITT-ZOLLARS

9 NUMBERED LOTS AND 20 LETTERED LOTS 109.683 ACRES

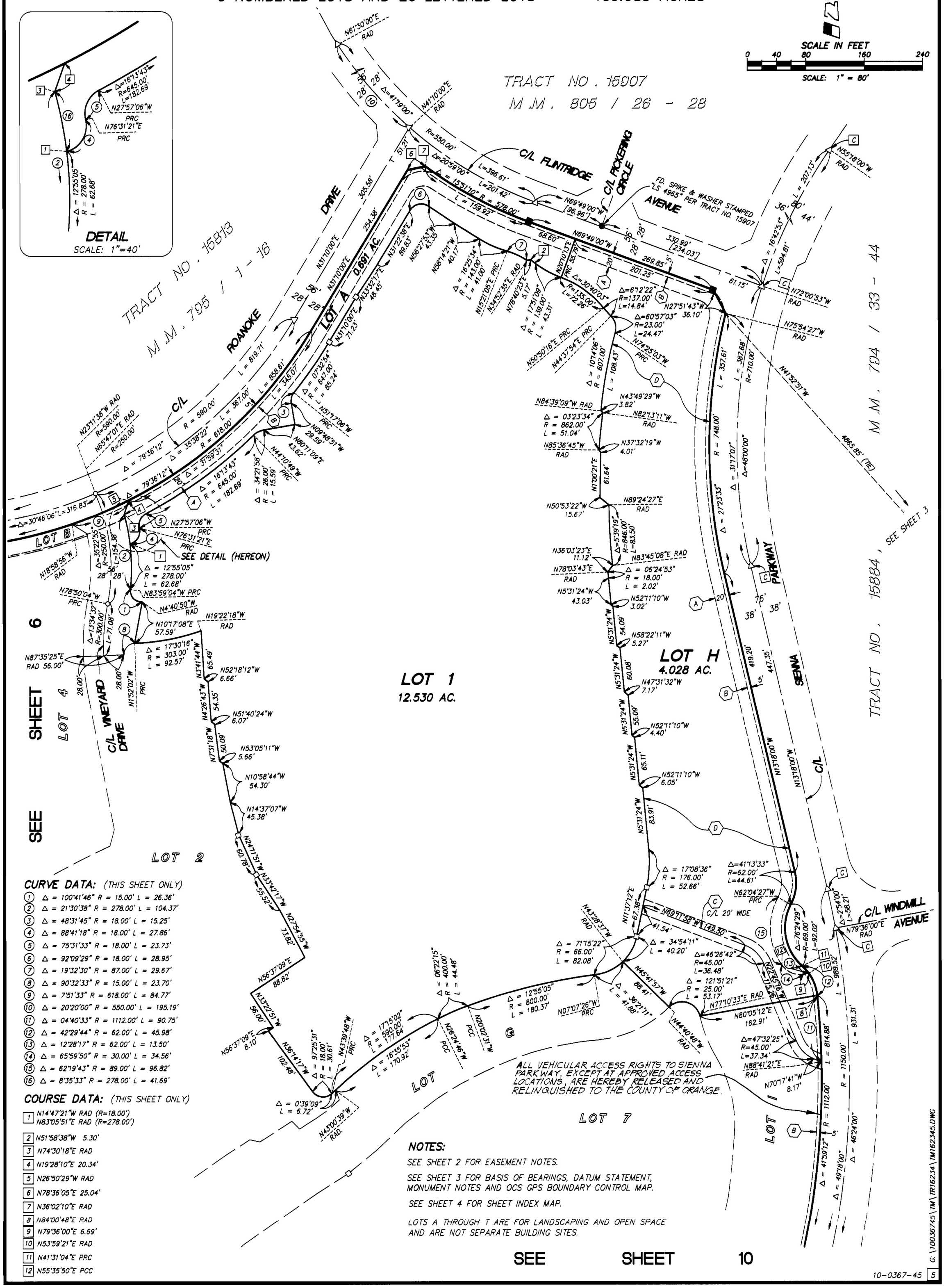

CURVE DATA: (THIS SHEET ONLY)

1. Δ = 100°41'46" R = 15.00' L = 26.36'
2. Δ = 21°30'38" R = 278.00' L = 104.37'
3. Δ = 48°31'45" R = 18.00' L = 15.25'
4. Δ = 88°41'18" R = 18.00' L = 27.86'
5. Δ = 75°31'33" R = 18.00' L = 23.73'
6. Δ = 92°09'29" R = 18.00' L = 28.95'
7. Δ = 19°32'30" R = 87.00' L = 29.67'
8. Δ = 90°32'33" R = 15.00' L = 23.70'
9. Δ = 7°51'33" R = 618.00' L = 84.77'
10. Δ = 20°20'00" R = 550.00' L = 195.19'
11. Δ = 04°40'33" R = 1112.00' L = 90.75'
12. Δ = 42°29'44" R = 62.00' L = 45.98'
13. Δ = 12°28'17" R = 62.00' L = 13.50'
14. Δ = 65°59'50" R = 30.00' L = 34.56'
15. Δ = 62°19'43" R = 89.00' L = 96.82'
16. Δ = 8°35'33" R = 278.00' L = 41.69'

COURSE DATA: (THIS SHEET ONLY)

1. N14°47'21"W RAD (R=18.00') N83°05'51"E RAD (R=278.00')
2. N51°58'38"W 5.30'
3. N74°30'18"E RAD
4. N19°28'10"E 20.34'
5. N26°50'29"W RAD
6. N78°36'05"E 25.04'
7. N36°02'10"E RAD
8. N84°00'48"E RAD
9. N79°36'00"E 6.69'
10. N53°59'21"E RAD
11. N41°31'04"E PRC
12. N55°35'50"E PCC

NOTES:

SEE SHEET 2 FOR EASEMENT NOTES.

SEE SHEET 3 FOR BASIS OF BEARINGS, DATUM STATEMENT, MONUMENT NOTES AND OCS GPS BOUNDARY CONTROL MAP.

SEE SHEET 4 FOR SHEET INDEX MAP.

LOTS A THROUGH T ARE FOR LANDSCAPING AND OPEN SPACE AND ARE NOT SEPARATE BUILDING SITES.

G:\10036745\TM\TR16234\TM162345.DWG

10-0367-45 5

SHEET 6 OF 11 SHEETS

A PORTION OF VESTING TENTATIVE TRACT NO. 16203

DATE OF SURVEY: JANUARY 1999

TRACT NO. 16234

IN THE UNINCORPORATED TERRITORY OF ORANGE COUNTY, CALIFORNIA

SEPTEMBER 2001 JAMES F. GILLEN, L.S. 5557

HUITT-ZOLLARS

9 NUMBERED LOTS AND 20 LETTERED LOTS 109.683 ACRES

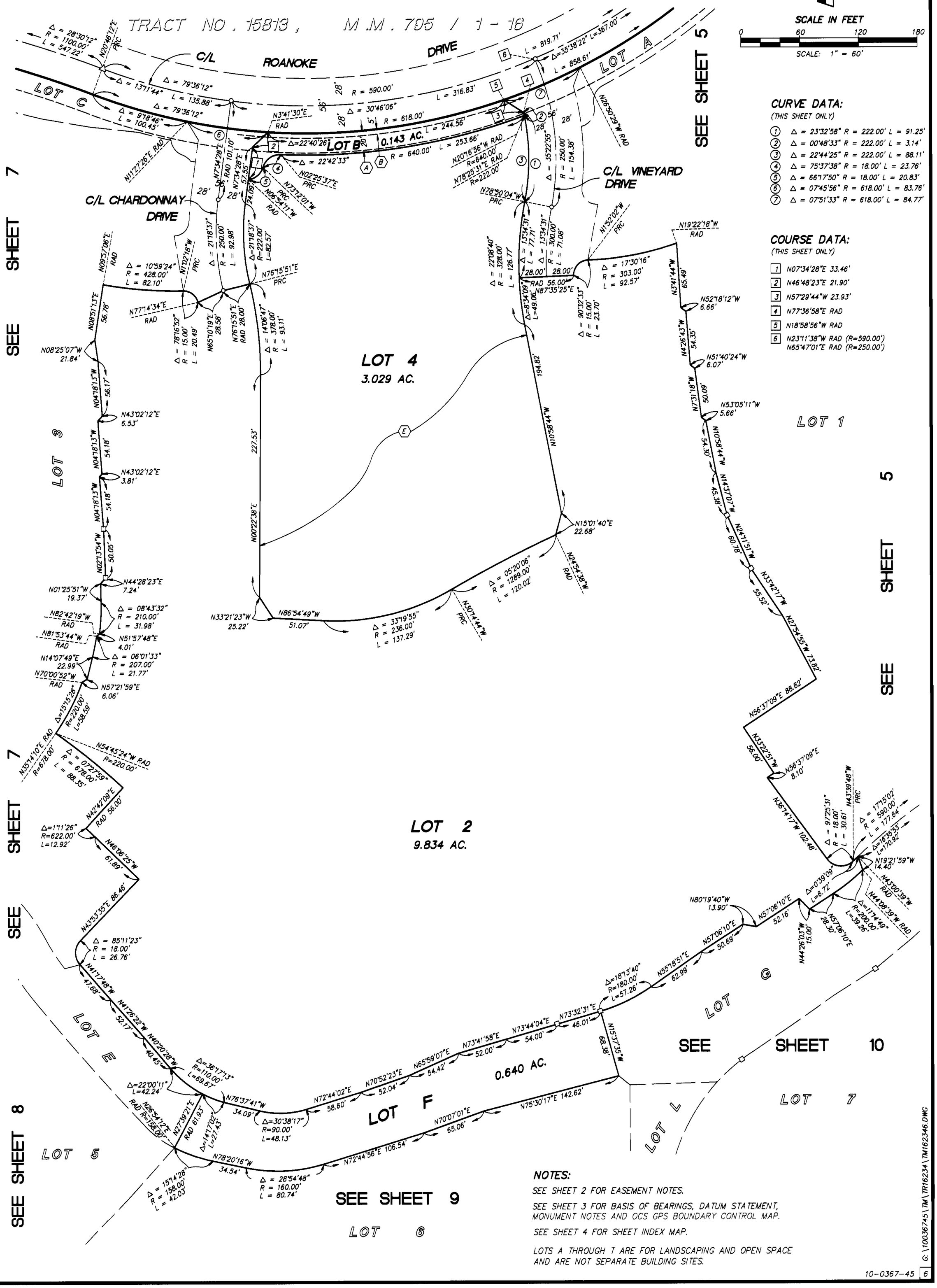

NOTES:

SEE SHEET 2 FOR EASEMENT NOTES.

SEE SHEET 3 FOR BASIS OF BEARINGS, DATUM STATEMENT, MONUMENT NOTES AND OCS GPS BOUNDARY CONTROL MAP.

SEE SHEET 4 FOR SHEET INDEX MAP.

LOTS A THROUGH T ARE FOR LANDSCAPING AND OPEN SPACE AND ARE NOT SEPARATE BUILDING SITES.

G:\10036745\TM\TR16234\TM162346.DWG

SHEET 7 OF 11 SHEETS

A PORTION OF VESTING
TENTATIVE TRACT NO. 16203

DATE OF SURVEY:
JANUARY 1999

TRACT NO. 16234

IN THE UNINCORPORATED TERRITORY OF ORANGE COUNTY, CALIFORNIA

SEPTEMBER 2001 JAMES F. GILLEN, L.S. 5557

HUITT-ZOLLARS

9 NUMBERED LOTS AND 20 LETTERED LOTS 109.683 ACRES

TRACT NO. 15813, M.M. 795 / 1-16

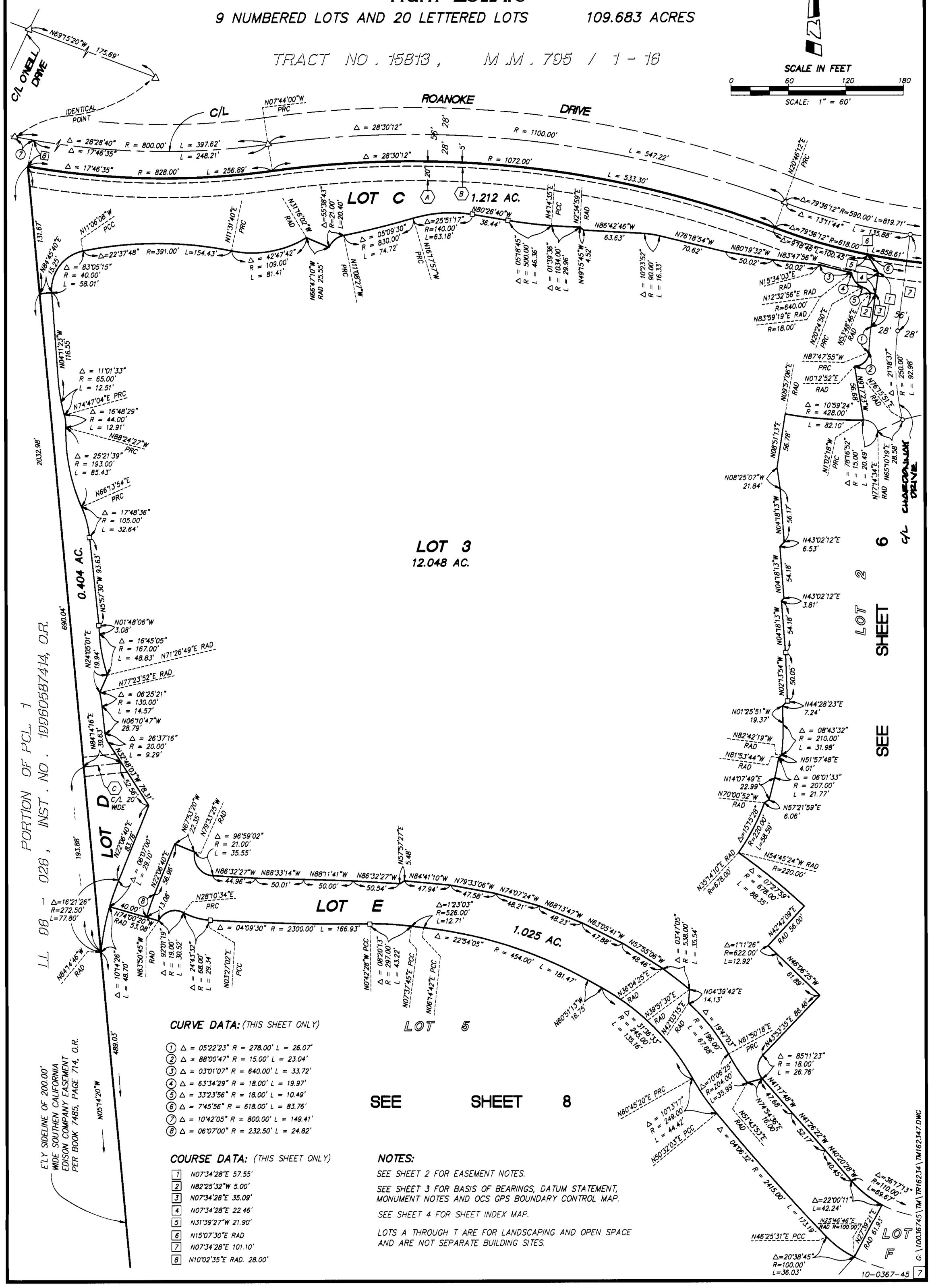

CURVE DATA: (THIS SHEET ONLY)

1. Δ = 05°22'23" R = 278.00' L = 26.07'
2. Δ = 88°00'47" R = 15.00' L = 23.04'
3. Δ = 03°01'07" R = 640.00' L = 33.72'
4. Δ = 63°34'29" R = 18.00' L = 19.97'
5. Δ = 33°23'56" R = 18.00' L = 10.49'
6. Δ = 7°45'56" R = 618.00' L = 83.76'
7. Δ = 10°42'05" R = 800.00' L = 149.41'
8. Δ = 06°07'00" R = 232.50' L = 24.82'

COURSE DATA: (THIS SHEET ONLY)

1. N07°34'28"E 57.55'
2. N82°25'32"W 5.00'
3. N07°34'28"E 35.09'
4. N07°34'28"E 22.46'
5. N31°39'27"W 21.90'
6. N15°07'30"E RAD
7. N07°34'28"E 101.10'
8. N10°02'35"E RAD. 28.00'

NOTES:

SEE SHEET 2 FOR EASEMENT NOTES.

SEE SHEET 3 FOR BASIS OF BEARINGS, DATUM STATEMENT, MONUMENT NOTES AND OCS GPS BOUNDARY CONTROL MAP.

SEE SHEET 4 FOR SHEET INDEX MAP.

LOTS A THROUGH T ARE FOR LANDSCAPING AND OPEN SPACE AND ARE NOT SEPARATE BUILDING SITES.

G:\10036745\TM\TR16234\TM162347.DWG

10-0367-45 7

SHEET 8 OF 11 SHEETS

TRACT NO. 16234

A PORTION OF VESTING TENTATIVE TRACT NO. 16203

IN THE UNINCORPORATED TERRITORY OF ORANGE COUNTY, CALIFORNIA

SEPTEMBER 2001 JAMES F. GILLEN, L.S. 5557

DATE OF SURVEY: JANUARY 1999

HUITT-ZOLLARS

9 NUMBERED LOTS AND 20 LETTERED LOTS 109.683 ACRES

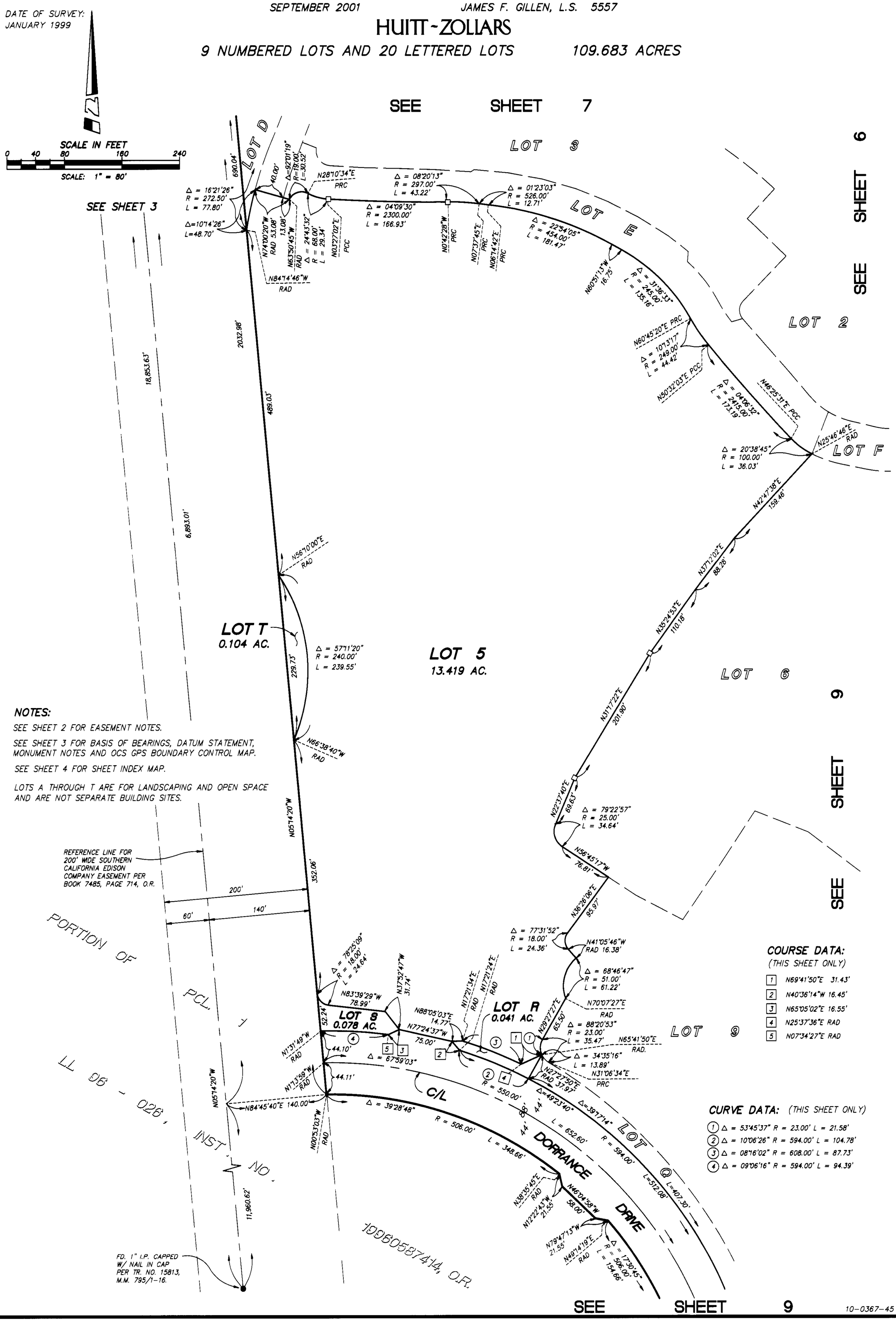

NOTES:

SEE SHEET 2 FOR EASEMENT NOTES.

SEE SHEET 3 FOR BASIS OF BEARINGS, DATUM STATEMENT, MONUMENT NOTES AND OCS GPS BOUNDARY CONTROL MAP.

SEE SHEET 4 FOR SHEET INDEX MAP.

LOTS A THROUGH T ARE FOR LANDSCAPING AND OPEN SPACE AND ARE NOT SEPARATE BUILDING SITES.

SEE SHEET 9

C:\10036745\TM\TR16234\TM162348.DWG

10-0367-45 8

SHEET 9 OF 11 SHEETS

TRACT NO. 16234

A PORTION OF VESTING
TENTATIVE TRACT NO. 16203

IN THE UNINCORPORATED TERRITORY OF ORANGE COUNTY, CALIFORNIA

SEPTEMBER 2001 JAMES F. GILLEN, L.S. 5557

DATE OF SURVEY:
JANUARY 1999

HUITT-ZOLLARS

9 NUMBERED LOTS AND 20 LETTERED LOTS 109.683 ACRES

SCALE IN FEET
0 40 80 160 240
SCALE: 1" = 80'

NOTES:

SEE SHEET 2 FOR EASEMENT NOTES.

SEE SHEET 3 FOR BASIS OF BEARINGS, DATUM STATEMENT, MONUMENT NOTES AND OCS GPS BOUNDARY CONTROL MAP.

SEE SHEET 4 FOR SHEET INDEX MAP.

LOTS A THROUGH T ARE FOR LANDSCAPING AND OPEN SPACE AND ARE NOT SEPARATE BUILDING SITES.

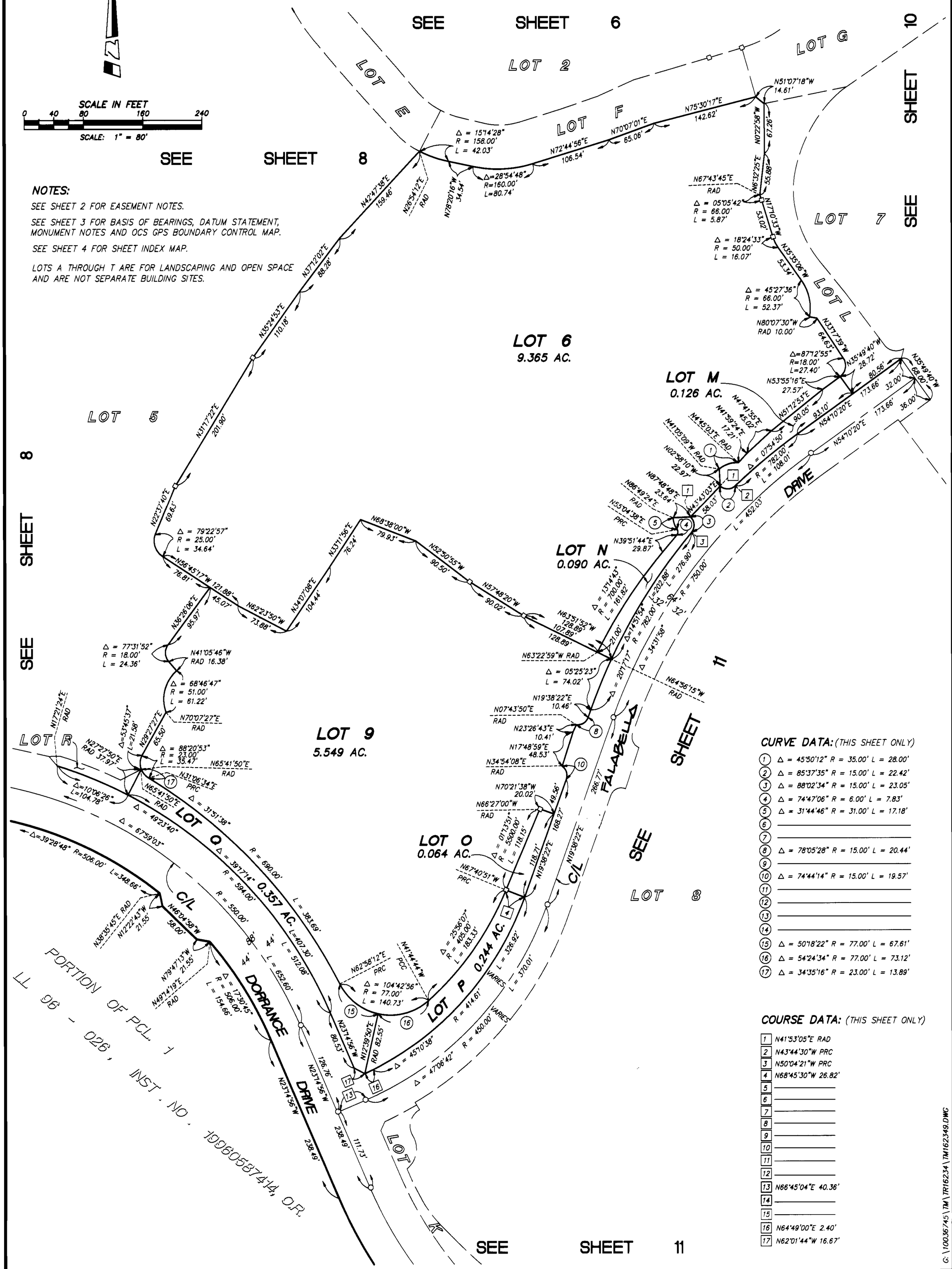

CURVE DATA: (THIS SHEET ONLY)

1. Δ = 45°50'12" R = 35.00' L = 28.00'
2. Δ = 85°37'35" R = 15.00' L = 22.42'
3. Δ = 88°02'34" R = 15.00' L = 23.05'
4. Δ = 74°47'06" R = 6.00' L = 7.83'
5. Δ = 31°44'46" R = 31.00' L = 17.18'
6. ____
7. ____
8. Δ = 78°05'28" R = 15.00' L = 20.44'
9. ____
10. Δ = 74°44'14" R = 15.00' L = 19.57'
11. ____
12. ____
13. ____
14. ____
15. Δ = 50°18'22" R = 77.00' L = 67.61'
16. Δ = 54°24'34" R = 77.00' L = 73.12'
17. Δ = 34°35'16" R = 23.00' L = 13.89'

COURSE DATA: (THIS SHEET ONLY)

1. N41°53'05"E RAD
2. N43°44'30"W PRC
3. N50°04'21"W PRC
4. N68°45'30"W 26.82'
5. ____
6. ____
7. ____
8. ____
9. ____
10. ____
11. ____
12. ____
13. N66°45'04"E 40.36'
14. ____
15. ____
16. N64°49'00"E 2.40'
17. N62°01'44"W 16.67'

G:\10036745\TM\TR16234\TM162349.DWG

SHEET 10 OF 11 SHEETS

TRACT NO. 16234

A PORTION OF VESTING TENTATIVE TRACT NO. 16203

IN THE UNINCORPORATED TERRITORY OF ORANGE COUNTY, CALIFORNIA

DATE OF SURVEY: JANUARY 1999

SEPTEMBER 2001 JAMES F. GILLEN, L.S. 5557

HUITT-ZOLLARS

9 NUMBERED LOTS AND 20 LETTERED LOTS 109.683 ACRES

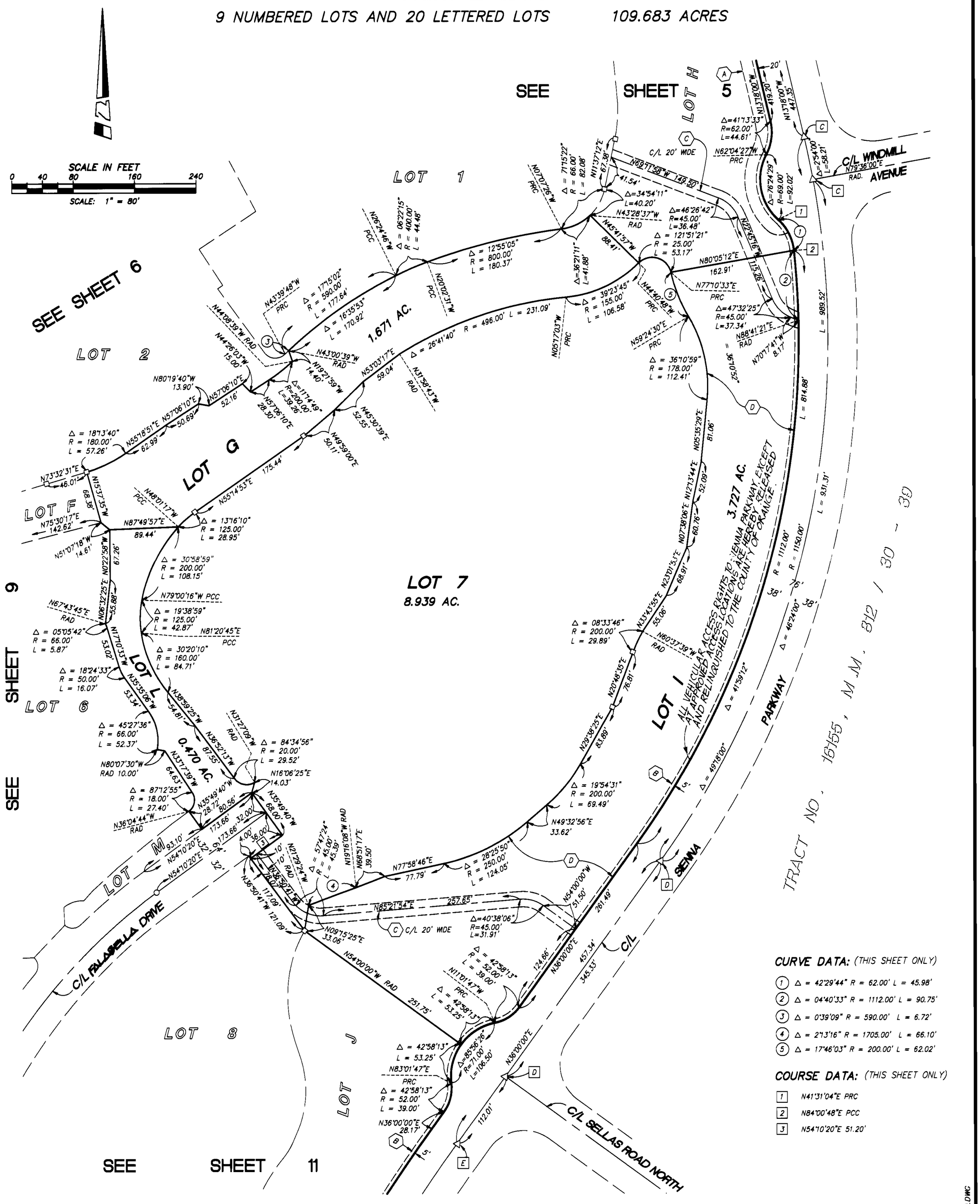

CURVE DATA: (THIS SHEET ONLY)

1. Δ = 42°29'44" R = 62.00' L = 45.98'
2. Δ = 04°40'33" R = 1112.00' L = 90.75'
3. Δ = 0°39'09" R = 590.00' L = 6.72'
4. Δ = 2°13'16" R = 1705.00' L = 66.10'
5. Δ = 17°46'03" R = 200.00' L = 62.02'

COURSE DATA: (THIS SHEET ONLY)

1. N41°31'04"E PRC
2. N84°00'48"E PCC
3. N54°10'20"E 51.20'

NOTES:

SEE SHEET 2 FOR EASEMENT NOTES.

SEE SHEET 3 FOR BASIS OF BEARINGS, DATUM STATEMENT, MONUMENT NOTES AND OCS GPS BOUNDARY CONTROL MAP.

SEE SHEET 4 FOR SHEET INDEX MAP.

LOTS A THROUGH T ARE FOR LANDSCAPING AND OPEN SPACE AND ARE NOT SEPARATE BUILDING SITES.

G:\10036745\TM\TR16234\T1623410.DWG

SHEET 11 OF 11 SHEETS

TRACT NO. 16234

A PORTION OF VESTING TENTATIVE TRACT NO. 16203

IN THE UNINCORPORATED TERRITORY OF ORANGE COUNTY, CALIFORNIA

DATE OF SURVEY: JANUARY 1999

SEPTEMBER 2001 JAMES F. GILLEN, L.S. 5557

HUITT-ZOLLARS

9 NUMBERED LOTS AND 20 LETTERED LOTS 109.683 ACRES

SCALE IN FEET 0 40 80 160 240

SCALE: 1" = 80'

CURVE DATA: (THIS SHEET ONLY)

1. Δ = 00°15'16" R = 2003.00' L = 8.90'
2. Δ = 44°27'23" R = 52.00' L = 40.35'
3. Δ = 94°11'00" R = 77.00' L = 126.57'
4. Δ = 47°05'30" R = 77.00' L = 63.29'
5. Δ = 47°05'30" R = 77.00' L = 63.29'
6. Δ = 5°44'21" R = 483.66' L = 48.45'
7. Δ = 04°10'59" R = 494.00' L = 36.07'
8. Δ = 81°55'52" R = 34.50' L = 49.33'
9. Δ = 90°46'19" R = 25.50' L = 40.40'
10. Δ = 24°56'57" R = 71.00' L = 30.92'
11. Δ = 08°08'22" R = 506.00' L = 71.88'

COURSE DATA: (THIS SHEET ONLY)

1. N82°49'53"W PRC
2. N38°22'30"W PRC
3. N47°26'30"E PRC
4. N88°06'07"W PRC
5. N23°14'56"W 4.52'
6. N24°03'36"E 13.27'
7. N24°49'28"W RAD
8. N0°20'33"E 65.19'
9. N12°40'22"E RAD
10. N11°40'35"W RAD

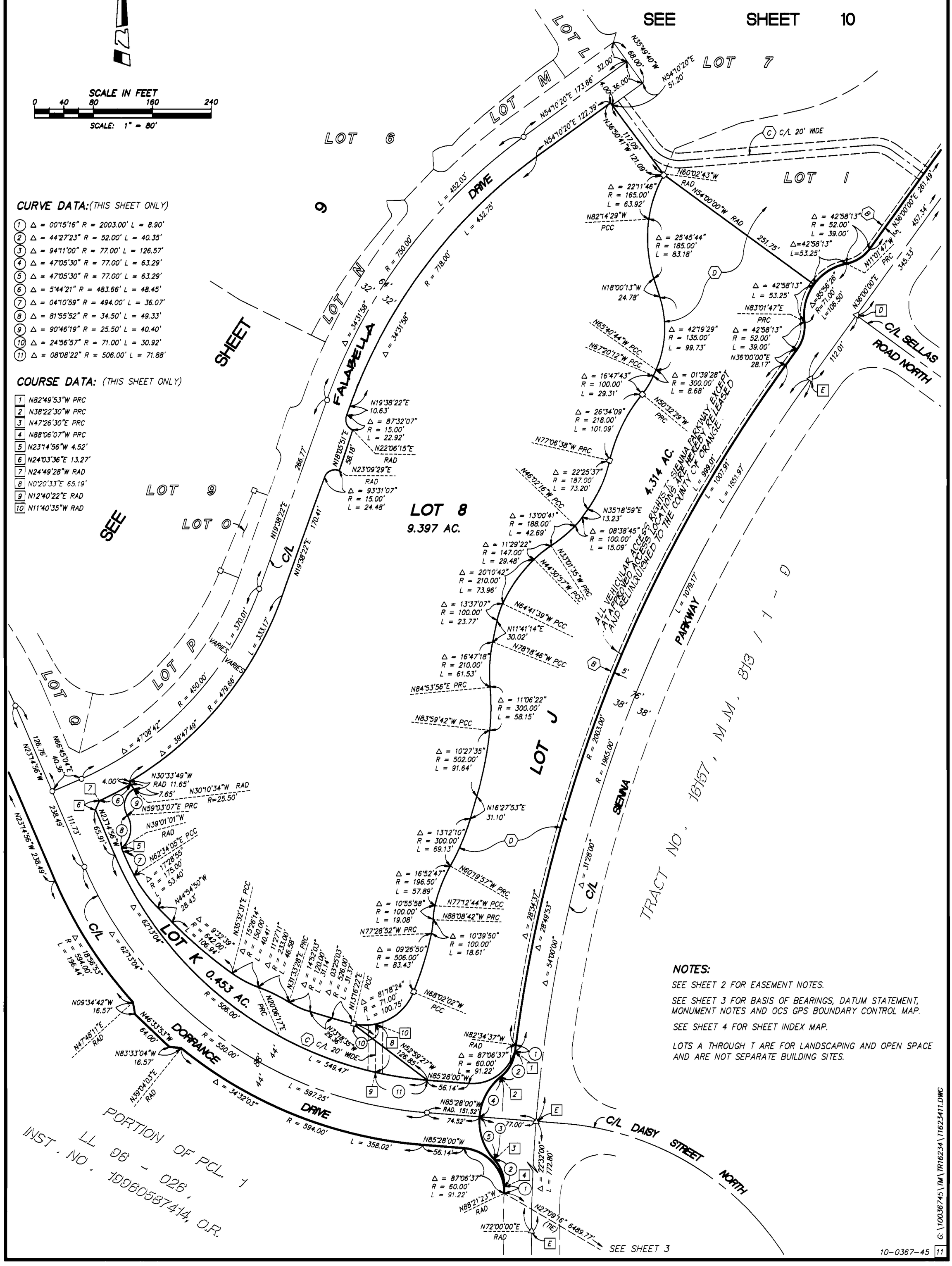

NOTES:

SEE SHEET 2 FOR EASEMENT NOTES.

SEE SHEET 3 FOR BASIS OF BEARINGS, DATUM STATEMENT, MONUMENT NOTES AND OCS GPS BOUNDARY CONTROL MAP.

SEE SHEET 4 FOR SHEET INDEX MAP.

LOTS A THROUGH T ARE FOR LANDSCAPING AND OPEN SPACE AND ARE NOT SEPARATE BUILDING SITES.

G:\10036745\TM\TR16234\T16234I1.DWG

10-0367-45 11