858 29

SHEET 1 OF 16 SHEETS
127 NUMBERED LOTS
34 LETTERED LOTS
101.015 ACRES
A PORTION OF VESTING
T.T.M. 15989
DATE OF SURVEY:
JANUARY, 1999

TRACT MAP NO. 16586

IN THE UNINCORPORATED TERRITORY OF THE COUNTY OF ORANGE, STATE OF CALIFORNIA

BEING A SUBDIVISION OF A PORTION OF PARCEL 1 OF LOT LINE ADJUSTMENT NO. LL 96-026, IN THE UNINCORPORATED TERRITORY OF THE COUNTY OF ORANGE, STATE OF CALIFORNIA, AS SHOWN ON EXHIBIT "B" ATTACHED TO THAT CERTAIN DOCUMENT RECORDED NOVEMBER 21, 1996 AS INSTRUMENT NO. 19960587414 OF OFFICIAL RECORDS, IN THE OFFICE OF THE COUNTY RECORDER OF SAID COUNTY.

HALL & FOREMAN, INC. STEVEN C. SHAMBECK, P.L.S. 6217

SEPTEMBER, 2003

ACCEPTED AND FILED AT THE REQUEST OF
FIRST AMERICAN TITLE INSURANCE COMPANY
DATE June 10, 2004
TIME 9:09 AM FEE$ 52.00
INSTRUMENT # 2004000524539
BOOK 858 PAGE 29-44 MM
TOM DALY
COUNTY CLERK-RECORDER
BY Sammy A. Demetry
DEPUTY

OWNERSHIP CERTIFICATE

WE, THE UNDERSIGNED, BEING ALL PARTIES HAVING ANY RECORD TITLE INTEREST IN THE LAND COVERED BY THIS MAP, DO HEREBY CONSENT TO THE PREPARATION AND RECORDATION OF SAID MAP, AS SHOWN WITHIN THE DISTINCTIVE BORDER LINE.

WE HEREBY DEDICATE TO THE COUNTY OF ORANGE:

1. THE EASEMENT FOR SCENIC PRESERVATION PURPOSES AS SHOWN ON SAID MAP FOR THE PURPOSES AND SUBJECT TO THE SAME CONDITIONS AND LIMITATIONS AS SHOWN IN THAT CERTAIN EASEMENT RECORDED SEPTEMBER 19, 1991 AS INSTRUMENT NO. 91-511820, OF OFFICIAL RECORDS.
2. THE EASEMENT FOR EMERGENCY ACCESS PURPOSES OVER ALL OF LOTS BA THROUGH BN AS SHOWN ON SAID MAP.
3. THE EASEMENT FOR FIRE PROTECTION ACCESS PURPOSES AS SHOWN ON SAID MAP.

WE ALSO HEREBY DEDICATE TO THE SANTA MARGARITA WATER DISTRICT THE EASEMENTS FOR WATER, RECYCLED WATER, SEWER, AND ACCESS PURPOSES OVER THOSE EASEMENT AREAS AS SHOWN ON SAID MAP WHICH EASEMENTS SHALL BE SUBJECT TO THE SAME CONDITIONS AS ARE SHOWN IN THAT CERTAIN GRANT OF EASEMENT TO SANTA MARGARITA WATER DISTRICT RECORDED SEPTEMBER 18, 2002 AS INSTRUMENT NO. 20020799401, OF OFFICIAL RECORDS, COUNTY OF ORANGE.

DMB LADERA, L.L.C., A DELAWARE LIMITED LIABILITY COMPANY

BY: RANCHO MISSION VIEJO, L.L.C. A DELAWARE LIMITED LIABILITY COMPANY, AS ITS AUTHORIZED AGENT AND MANAGER

BY: _____ BY: _____
PRINT NAME: Donald T. Stahlin PRINT NAME: Gregory S. Edwards
PRINT TITLE: V.P. PRINT TITLE: C.F.O.

NOTARY ACKNOWLEDGEMENT

STATE OF California)
COUNTY OF Orange)SS

ON January 20, 2004 BEFORE ME, Diana L. Binks Notary Public

PERSONALLY APPEARED Donald T. Stahlin and Gregory S. Edwards
PERSONALLY KNOWN TO ME (~~OR PROVED TO ME ON THE BASIS OF SATISFACTORY EVIDENCE~~) TO BE THE PERSON(S) WHOSE NAME(S) IS/ARE SUBSCRIBED TO THE WITHIN INSTRUMENT AND ACKNOWLEDGED TO ME THAT HE/SHE/THEY EXECUTED THE SAME IN HIS/HER/THEIR AUTHORIZED CAPACITY(IES), AND THAT BY HIS/HER/THEIR SIGNATURE(S) ON THE INSTRUMENT THE PERSON(S), OR THE ENTITY UPON BEHALF OF WHICH THE PERSON(S) ACTED, EXECUTED THE INSTRUMENT.

WITNESS MY HAND:

Diana L. Binks
NOTARY PUBLIC IN AND FOR SAID STATE

Diana L. Binks
PRINT NAME

MY PRINCIPAL PLACE OF BUSINESS IS IN Orange COUNTY
MY COMMISSION EXPIRES 12/12/06

CERTIFICATE OF ACCEPTANCE

THE UNDERSIGNED, BEING THE DULY APPOINTED AGENT OF THE SANTA MARGARITA WATER DISTRICT, A PUBLIC CORPORATION OF ORANGE COUNTY, CALIFORNIA, PURSUANT TO ITS RESOLUTION NO. 88-10-02, DOES HEREBY ACCEPT ON BEHALF OF SAID DISTRICT THE EASEMENTS FOR, WATER, RECYCLED WATER, SEWER, AND ACCESS PURPOSES, AS DEDICATED AND AS SHOWN ON THIS TRACT MAP, BY AND BETWEEN THE SANTA MARGARITA WATER DISTRICT AND DMB LADERA, L.L.C., AND DOES HEREBY CERTIFY THAT THE GRANTEE CONSENTS TO THE RECORDATION OF SAID TRACT.

DANIEL R. FERONS, CHIEF ENGINEER
SANTA MARGARITA WATER DISTRICT

SEE SHEET 2 FOR ADDITIONAL NOTARY ACKNOWLEDGMENT AND SIGNATURE OMISSIONS

SURVEYOR'S STATEMENT

THIS MAP WAS PREPARED BY ME OR UNDER MY DIRECTION AND IS BASED UPON A FIELD SURVEY IN CONFORMANCE WITH THE REQUIREMENTS OF THE SUBDIVISION MAP ACT AND LOCAL ORDINANCE AT THE REQUEST OF DMB LADERA, LLC IN JANUARY, 1999. I HEREBY STATE THAT ALL MONUMENTS ARE OF THE CHARACTER AND OCCUPY THE POSITIONS INDICATED, OR THAT THEY WILL BE SET IN SUCH POSITIONS; AND THAT SAID MONUMENTS ARE SUFFICIENT TO ENABLE THE SURVEY TO BE RETRACED. I HEREBY STATE THAT THIS FINAL MAP SUBSTANTIALLY CONFORMS TO THE CONDITIONALLY APPROVED TENTATIVE MAP.

STEVEN C. SHAMBECK, P.L.S. 6217 — DATE 1-12-04
LICENSE EXPIRES: 3/31/06

LICENSED LAND SURVEYOR — STATE CRAIG SHAMBECK — No. 6217 Exp. 3/31/06 — STATE OF CALIFORNIA

COUNTY SURVEYOR'S STATEMENT

I HEREBY STATE THAT I HAVE EXAMINED THIS MAP AND HAVE FOUND IT TO BE SUBSTANTIALLY IN CONFORMANCE WITH THE TENTATIVE MAP AS FILED WITH, AMENDED AND APPROVED BY THE ORANGE COUNTY SUBDIVISION COMMITTEE; THAT ALL PROVISIONS OF THE SUBDIVISION MAP ACT AND COUNTY SUBDIVISION REGULATIONS HAVE BEEN COMPLIED WITH AND I AM SATISFIED SAID MAP IS TECHNICALLY CORRECT.

DATED THIS 13TH DAY OF MAY, 2004.

RAYMOND L. MATHE, COUNTY SURVEYOR
L.S. 6185 EXPIRATION DATE: 3/31/06

BY: MICHAEL K. SULLIVAN, DEPUTY
LS 6254 EXPIRES 6/30/06

CLERK OF THE BOARD OF SUPERVISOR'S CERTIFICATE

STATE OF CALIFORNIA }
COUNTY OF ORANGE } SS

I HEREBY CERTIFY THAT THIS MAP WAS PRESENTED FOR APPROVAL TO THE BOARD OF SUPERVISORS OF ORANGE COUNTY AT A REGULAR MEETING THEREOF HELD ON THE Eight DAY OF June, 2004 AND THAT THEREUPON SAID BOARD DID, BY AN ORDER DULY PASSED AND ENTERED, APPROVE SAID MAP.

AND DID ACCEPT ON BEHALF OF THE COUNTY OF ORANGE:

1. THE EASEMENT FOR SCENIC PRESERVATION PURPOSES AS DEDICATED.
2. THE EASEMENT FOR EMERGENCY ACCESS PURPOSES OVER ALL OF LOTS BA THROUGH BN AS DEDICATED.
3. THE EASEMENT FOR FIRE PROTECTION ACCESS PURPOSES AS DEDICATED.

AND DID ALSO APPROVE SUBJECT MAP PURSUANT TO THE PROVISIONS OF SECTION 66436(a)(3)(A) OF THE SUBDIVISION MAP ACT.

DATED THIS 8th DAY OF June, 2004

DARLENE J. BLOOM
CLERK OF THE BOARD OF SUPERVISORS

COUNTY TREASURER-TAX COLLECTOR'S CERTIFICATE

STATE OF CALIFORNIA)
)SS
COUNTY OF ORANGE)

I HEREBY CERTIFY THAT ACCORDING TO THE RECORDS OF MY OFFICE THERE ARE NO LIENS AGAINST THE LAND COVERED BY THIS MAP OR ANY PART THEREOF FOR UNPAID STATE, COUNTY, MUNICIPAL OR LOCAL TAXES OR SPECIAL ASSESSMENTS COLLECTED AS TAXES, EXCEPT TAXES OR SPECIAL ASSESSMENTS COLLECTED AS TAXES NOT YET PAYABLE.

AND DO ALSO CERTIFY TO THE RECORDER OF THE COUNTY OF ORANGE THAT THE PROVISIONS OF THE SUBDIVISION MAP ACT HAVE BEEN COMPLIED WITH REGARDING DEPOSITS TO SECURE PAYMENT OF TAXES OR SPECIAL ASSESSMENTS COLLECTED AS TAXES ON THE LAND COVERED BY THIS MAP.

DATED THIS 24th DAY OF February, 2004.

JOHN M.W. MOORLACH
COUNTY TREASURER-TAX COLLECTOR

BY: _____
DEPUTY TREASURER - TAX COLLECTOR

JOB NO. 99159-009
U:\99159\MAPPING\FINAL MAPS\TR16586\1658601.DWG

858 29

858 30

SHEET 2 OF 16 SHEETS
127 NUMBERED LOTS
34 LETTERED LOTS
101.015 ACRES
A PORTION OF VESTING
T.T.M. 15989
DATE OF SURVEY:
JANUARY, 1999

TRACT MAP NO. 16586

IN THE UNINCORPORATED TERRITORY OF THE COUNTY OF ORANGE,
STATE OF CALIFORNIA

HALL & FOREMAN, INC. STEVEN C. SHAMBECK, P.L.S. 6217
SEPTEMBER, 2003

SANTA MARGARITA WATER DISTRICT

STATE OF CALIFORNIA)
)SS
COUNTY OF ORANGE)

ON THIS 13th DAY OF FEBRUARY 2004, BEFORE ME, Cindy R. Lane A NOTARY PUBLIC IN AND FOR SAID STATE, PERSONALLY APPEARED DANIEL R. FERONS PERSONALLY KNOWN TO ME ~~OR PROVED TO ME ON THE BASIS OF SATISFACTORY EVIDENCE~~ TO BE THE PERSON WHOSE NAME IS SUBSCRIBED TO THE WITHIN INSTRUMENT AND ACKNOWLEDGED TO ME THAT HE EXECUTED THE SAME IN HIS AUTHORIZED CAPACITY, AND THAT BY HIS SIGNATURE ON THE INSTRUMENT THE PERSON OR THE ENTITY UPON BEHALF OF WHICH THE PERSON ACTED, EXECUTED THE INSTRUMENT.

WITNESS MY HAND: MY COMMISSION EXPIRES FEB 20, 2005

Cindy R. Lane
NOTARY PUBLIC IN AND FOR SAID STATE

MY PRINCIPAL PLACE OF BUSINESS IS IN ORANGE COUNTY

CINDY R. LANE
PRINT NAME

AUTOMATIC FIRE SPRINKLER NOTE:
ALL SINGLE FAMILY HOMES AND ALL MULTI FAMILY HOMES SHALL BE PROTECTED WITH AUTOMATIC SPRINKLER SYSTEMS.

SPECIAL FIRE PROTECTION NOTE:
PROPERTY IS IN FROM A SPECIAL FIRE PROTECTION AREA AND HAS RECIEVED A MODIFIED EXCLUSION FROM OCFA PER EXCLUSION LETTER DATED AUGUST 24, 2001

HIGH FIRE HAZARD AREA NOTE:
THE LOTS SHOWN ON THIS MAP ARE IN A HIGH FIRE HAZARD AREA DUE TO WILD LAND EXPOSURE.

SIGNATURE OMISSIONS

PURSUANT TO THE PROVISIONS OF SECTION 66436 (a)(3)(A) OF THE SUBDIVISION MAP ACT, THE FOLLOWING SIGNATURES HAVE BEEN OMITTED:

LADERA DEVELOPMENT COMPANY, L.L.C., HOLDER OF OIL, GAS, AND MINERAL RIGHTS PER DEED RECORDED DECEMBER 10, 1996 AS INSTRUMENT NO. 19960624029 OF OFFICIAL RECORDS.

EASEMENT NOTES

(A) INDICATES WATER, RECYCLED WATER, SEWER AND ACCESS EASEMENT DEDICATED TO SANTA MARGARITA WATER DISTRICT.

(D) INDICATES SCENIC PRESERVATION EASEMENT AS DEDICATED TO THE COUNTY OF ORANGE.

(E) INDICATES FIRE PROTECTION ACCESS EASEMENT AS DEDICATED TO THE COUNTY OF ORANGE. (SEE SHEET 15 FOR EASEMENT DETAIL)

(F) INDICATES TRAIL FOR COMMUNITY PEDESTRIAN PURPOSES.

BASIS OF BEARINGS

THE BEARINGS SHOWN HEREON ARE BASED ON THE BEARING BETWEEN O.C.S. HORIZONTAL CONTROL STATION GPS NO. 1417 AND STATION GPS NO. 1448, BEING NORTH 10°48'13" EAST PER RECORDS ON FILE IN THE OFFICE OF THE ORANGE COUNTY SURVEYOR.

DATUM STATEMENT

COORDINATES SHOWN ARE BASED ON THE CALIFORNIA COORDINATE SYSTEM (CCS 83), ZONE VI, 1983 NAD (1991.35 EPOCH OCS GPS ADJUSTMENT). ALL DISTANCES ARE GROUND DISTANCES UNLESS OTHERWISE NOTED. TO OBTAIN GRID DISTANCE MULTIPLY GROUND DISTANCE BY 0.999948295. THIS FACTOR IS PROJECT-SPECIFIC.

MONUMENT NOTES

● INDICATES FOUND MONUMENT AS NOTED.

[A] INDICATES FOUND 2 1/2" IRON PIPE W/2" OCS BRASS CAP STAMPED "GPS 1448 9-95" PER TRACT NO. 16203, M.M. 826/8-20 AND RECORD ON FILE IN THE ORANGE COUNTY SURVEYORS OFFICE.
N2146790.819, E6142602.585

[B] INDICATES FOUND 2 1/2" IRON PIPE W/2" OCS BRASS CAP STAMPED "GPS 1417 9-95" PER TRACT NO. 16203, M.M. 826/8-20 AND RECORD ON FILE IN THE ORANGE COUNTY SURVEYORS OFFICE.
N2141450.558, E6141563.535

○ INDICATES 2" I.P. TAGGED L.S. 6217 OR SPIKE & WASHER STAMPED L.S. 6217 OR LEAD, TACK & TAG L.S. 6217 TO BE SET PER TRACT NO. 15988 M.M. 854/6-16, UNLESS OTHERWISE NOTED.

⬡ INDICATES 1" I.P. TAGGED L.S. 6217 OR SPIKE & WASHER STAMPED L.S. 6217 OR LEAD, TACK & TAG L.S. 6217 TO BE SET PER TRACT NO. 15988 M.M. 854/6-16, UNLESS OTHERWISE NOTED.

□ INDICATES 1" I.P. TAGGED P.L.S. 5557 OR SPIKE & WASHER STAMPED P.L.S. 5557 OR LEAD, TACK & TAG P.L.S. 5557 TO BE SET PER TRACT NO. 15986 M.M. 849/1-15, UNLESS OTHERWISE NOTED.

△ INDICATES 2" I.P. TAGGED P.L.S. 5557 OR SPIKE & WASHER STAMPED P.L.S. 5557 OR LEAD, TACK & TAG P.L.S. 5557 TO BE SET PER TRACT NO. 15986 M.M. 849/1-15, UNLESS OTHERWISE NOTED.

2" I.P. TAGGED L.S. 6217 OR SPIKE & WASHER STAMPED L.S. 6217 OR LEAD, TACK & TAG L.S. 6217 TO BE SET AT ALL TRACT BOUNDARY CORNERS WITHIN 90 DAYS AFTER ACCEPTANCE OF IMPROVEMENTS.

1" I.P. TAGGED L.S. 6217 OR SPIKE & WASHER STAMPED L.S. 6217 OR LEAD, TACK & TAG L.S. 6217 TO BE SET AT LOT CORNERS WITHIN 90 DAYS AFTER ACCEPTANCE OF IMPROVEMENTS.

1" I.P. TAGGED L.S. 6217 OR SPIKE & WASHER STAMPED L.S. 6217 OR LEAD, TACK & TAG L.S. 6217 TO BE SET AT ALL CENTERLINE INTERSECTIONS, E.C.'S AND B.C.'S WITHIN 90 DAYS AFTER ACCEPTANCE OF IMPROVEMENTS.

NOTES

LOTS BA THROUGH BN ARE FOR PRIVATE STREET PURPOSES AND ARE NOT SEPARATE BUILDING SITES.

LOTS A THROUGH T ARE FOR LANDSCAPE/OPEN SPACE PURPOSES AND ARE NOT SEPARATE RESIDENTIAL BUILDING SITES.

LOTS 123 THROUGH 127 ARE NOT RESIDENTIAL BUILDING SITES. BUT ARE PRIVATE RECREATION SITES.

( ) INDICATES MEASURED AND RECORD PER RECORD OF SURVEY 97-1086 R.S.B. 167/26-28.

[ ] INDICATES MEASURED AND RECORD PER TRACT NO. 15988 M.M. 854/6-16

{ } INDICATES MEASURED AND RECORD PER TRACT NO. 15986 M.M. 849/1-15.

858 30

JOB NO. 99159-009
U:\99159\MAPPING\FINAL MAPS\TR16586\1658601.DWG

858 31

SHEET 3 OF 16 SHEETS
127 NUMBERED LOTS
34 LETTERED LOTS
101.015 ACRES
A PORTION OF VESTING
T.T.M. 15989
DATE OF SURVEY:
JANUARY, 1999

TRACT MAP NO. 16586

IN THE UNINCORPORATED TERRITORY OF THE COUNTY OF ORANGE,
STATE OF CALIFORNIA

HALL & FOREMAN, INC. STEVEN C. SHAMBECK, P.L.S. 6217
SEPTEMBER, 2003

BOUNDARY AND INDEX SHEET

SEE SHEET 2 FOR BASIS OF BEARINGS, DATUM STATEMENT, MONUMENT NOTES, EASEMENT NOTES AND NOTES

CURVE DATA				
CURVE	DELTA	RADIUS	LENGTH	TANGENT
C1	[13°51'40"	276.00	66.77	33.55]
C2	[82°36'17"	30.00	43.25	26.36]
C3	[0°32'52"	485.00	4.64	2.32]
C4	[80°41'41"	30.00	42.25	25.48]
C5	[79°38'44"	30.00	41.70	25.02]
C6	[81°57'08"	30.00	42.91	26.06]
C7	[81°39'46"	30.00	42.76	25.92]
C8	[90°00'00"	30.00	47.12	30.00]
C9	66°03'14"	50.00	57.64	32.50
C10	81°12'57"	30.00	42.52	25.72
C11	88°11'28"	30.00	46.18	29.07
C12	80°27'37"	30.00	42.13	25.38
C13	21°03'02"	326.00	119.77	60.57
C14	84°55'28"	30.00	44.47	27.45
C15	{90°00'00"	30.00	47.12	30.00}
C16	[72°54'54"	224.00	285.06	165.49]

LINE DATA		
LINE	BEARING	LENGTH
L1	[N36°23'43"W	10.60]
L2	[N57°39'06"W	28.00] (RAD)
L3	[N58°11'58"W	22.00] (RAD)
L4	[N67°30'17"W	36.10]
L5	[N77°42'51"E	0.29]
L6	[N54°40'40"E	2.15]
L7	N61°14'23"W	29.00
L8	N28°45'37"E	2.90
L9	N61°14'23"W	29.00 (RAD)
L10	N71°38'43"E	3.24
L11	N89°24'18"E	11.28
L12	N77°45'52"W	30.00
L13	N64°56'03"W	11.28
L14	[N84°35'23"W	52.00] (RAD)

JOB NO. 99159-009
U:\99159\MAPPING\FINAL MAPS\TR16586\1658603.DWG

858 31

858 32

SHEET 4 OF 16 SHEETS
127 NUMBERED LOTS
34 LETTERED LOTS
101.015 ACRES
A PORTION OF VESTING
T.T.M. 15989
DATE OF SURVEY:
JANUARY, 1999

TRACT MAP NO. 16586

IN THE UNINCORPORATED TERRITORY OF THE COUNTY OF ORANGE,
STATE OF CALIFORNIA

HALL & FOREMAN, INC. STEVEN C. SHAMBECK, P.L.S. 6217
SEPTEMBER, 2003

SEE SHEET 2 FOR BASIS OF BEARINGS, DATUM STATEMENT, MONUMENT NOTES, EASEMENT NOTES AND NOTES

N

1"=50'

CURVE DATA				
CURVE	DELTA	RADIUS	LENGTH	TANGENT
C1	13°51'40"	276.00	66.77	33.55
C2	82°36'17"	30.00	43.25	26.36
C3	0°32'52"	485.00	4.64	2.32
C4	80°41'41"	30.00	42.25	25.48
C5	80°27'37"	30.00	42.13	25.38
C6	84°55'28"	30.00	44.47	27.45
C7	90°00'00"	30.00	47.12	30.00
C8	12°15'45"	88.00	18.83	9.45
C9	13°51'42"	112.00	27.10	13.61
C10	77°28'39"	25.00	33.81	20.06
C11	21°54'24"	25.00	9.56	4.84
C12	73°14'48"	27.00	34.52	20.07
C13	84°54'57"	25.00	37.05	22.87
C14	2°04'09"	457.00	16.50	8.25
C15	5°25'53"	457.00	43.32	21.68
C16	7°30'02"	457.00	59.83	29.96
C17	4°30'21"	323.00	25.40	12.71
C18	15°29'57"	60.00	16.23	8.17
C19	252°40'14"	60.00	264.60	81.57
C20	7°30'02"	485.00	63.49	31.79
C21	8°02'54"	485.00	68.13	34.12
C22	8°02'54"	507.00	71.22	35.67

CURVE DATA				
CURVE	DELTA	RADIUS	LENGTH	TANGENT
C23	13°53'10"	485.00	117.54	59.06
C24	31°06'35"	250.00	135.74	69.59
C25	5°50'17"	485.00	49.42	24.73
C26	6°16'29"	250.00	27.38	13.70
C27	24°50'06"	250.00	108.36	55.05
C28	1°54'02"	603.00	20.00	10.00
C29	0°18'02"	693.00	3.63	1.82
C30	1°34'47"	88.00	2.43	1.21

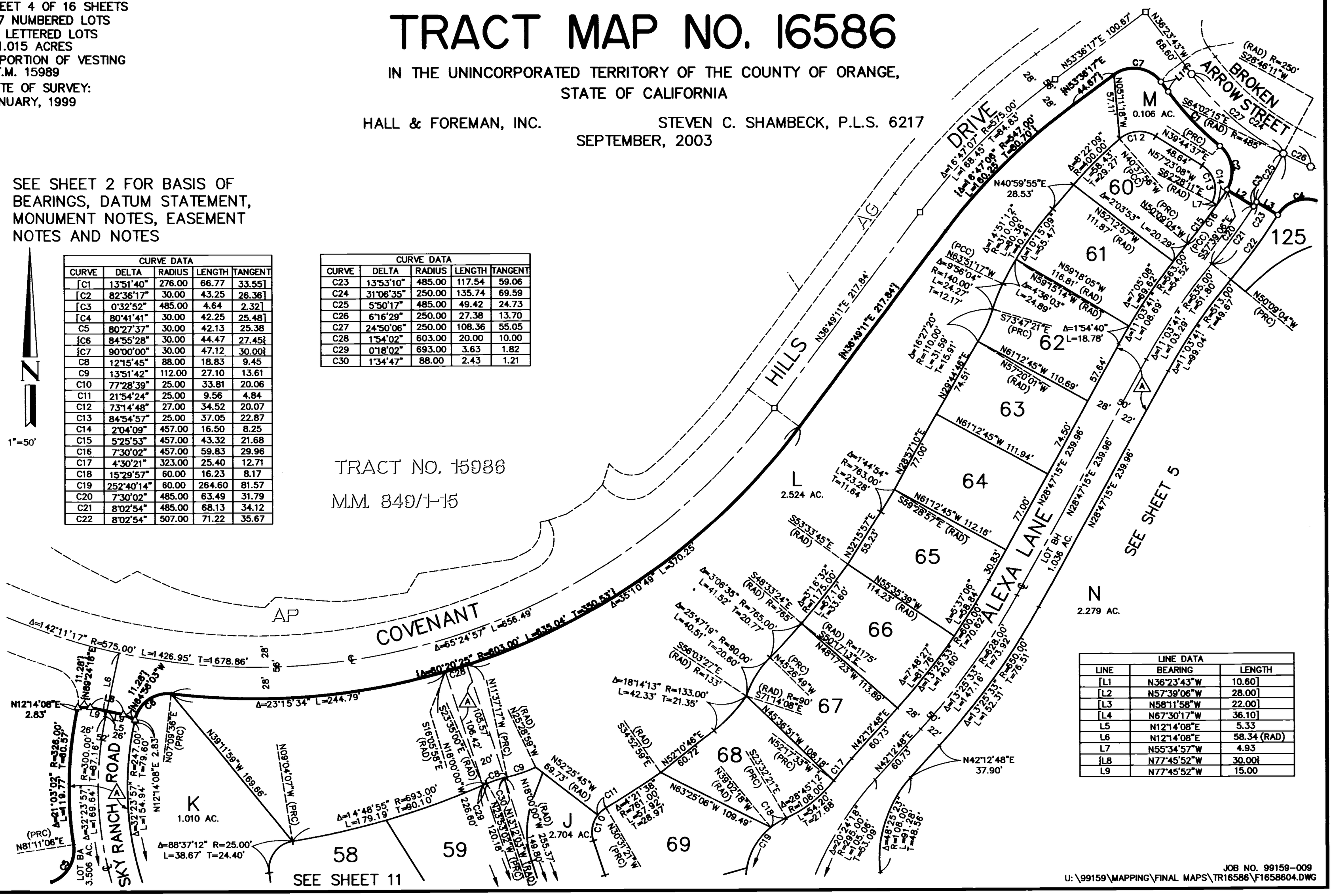

LINE DATA		
LINE	BEARING	LENGTH
L1	N36°23'43"W	10.60
L2	N57°39'06"W	28.00
L3	N58°11'58"W	22.00
L4	N67°30'17"W	36.10
L5	N12°14'08"E	5.33
L6	N12°14'08"E	58.34 (RAD)
L7	N55°34'57"W	4.93
L8	N77°45'52"W	30.00
L9	N77°45'52"W	15.00

JOB NO. 99159-009
U:\99159\MAPPING\FINAL MAPS\TR16586\F1658604.DWG

SHEET 5 OF 16 SHEETS
127 NUMBERED LOTS
34 LETTERED LOTS
101.015 ACRES
A PORTION OF VESTING
T.T.M. 15989
DATE OF SURVEY:
JANUARY, 1999

TRACT MAP NO. 16586

IN THE UNINCORPORATED TERRITORY OF THE COUNTY OF ORANGE,
STATE OF CALIFORNIA

HALL & FOREMAN, INC.

STEVEN C. SHAMBECK, P.L.S. 6217
SEPTEMBER, 2003

SEE SHEET 2 FOR BASIS OF BEARINGS, DATUM STATEMENT, MONUMENT NOTES, EASEMENT NOTES AND NOTES

CURVE DATA				
CURVE	DELTA	RADIUS	LENGTH	TANGENT
C1	[0°32'52"	485.00	4.64	2.32]
C2	[80°41'41"	30.00	42.25	25.48]
C3	4°42'44"	299.00	24.59	12.30
C4	7°30'02"	457.00	59.83	29.96
C5	7°30'02"	485.00	63.49	31.79
C6	8°02'54"	485.00	68.13	34.12
C7	8°02'54"	507.00	71.22	35.67
C8	22°58'01"	224.00	89.79	45.51
C9	0°13'47"	224.00	0.90	0.45
C10	125°00'35"	20.00	43.64	38.43
C11	22°19'29"	224.00	87.28	44.20
C12	12°28'10"	60.00	13.06	6.55
C13	100°29'10"	12.00	21.05	14.42
C14	38°33'23"	60.00	40.38	20.99
C15	114°09'19"	20.00	39.85	30.89
C16	2°32'29"	243.00	10.78	5.39
C17	0°26'21"	328.00	2.51	1.26
C18	9°01'28"	60.00	9.45	4.74
C19	47°30'23"	60.00	49.75	26.40
C20	52°03'01"	48.00	43.61	23.44
C21	45°50'19"	48.00	38.40	20.30
C22	34°16'17"	28.00	16.75	8.63
C23	10°37'07"	177.00	32.80	16.45
C24	18°00'36"	193.00	60.67	30.59
C25	63°25'08"	108.00	119.54	66.73
C26	4°44'45"	60.00	4.97	2.49
C27	29°42'41"	60.00	31.11	15.91
C28	15°14'15"	150.00	39.89	20.06
C29	24°45'43"	77.00	33.28	16.90
C30	21°22'14"	103.00	38.42	19.43
C31	19°26'57"	90.00	30.55	15.42
C32	15°34'42"	60.00	16.31	8.21
C33	52°25'03"	60.00	54.89	29.54
C34	30°00'00"	60.00	31.42	16.08
C35	82°25'04"	60.00	86.31	52.54
C36	13°33'10"	102.00	24.13	12.12
C37	34°26'14"	102.00	61.31	31.61
C38	47°59'24"	102.00	85.43	45.40
C39	44°36'10"	9.00	7.01	3.69
C40	29°18'22"	60.00	30.69	15.69
C41	69°48'10"	60.00	73.10	41.86
C42	103°17'37"	60.00	108.17	75.83
C43	4°11'05"	60.00	4.38	2.19
C44	52°17'55"	25.00	22.82	12.27
C45	3°48'20"	270.00	17.93	8.97
C46	7°36'39"	270.00	35.87	17.96
C47	3°48'20"	270.00	17.93	8.97

LINE DATA		
LINE	BEARING	LENGTH
L1	[N57°39'06"W]	28.00 (RAD)
L2	[N58°11'58"W]	22.00 (PRC)
L3	N50°09'04"W	16.79 (RAD)
L4	N84°49'10"W	7.73 (RAD)
L5	N78°11'09"W	22.90 (RAD)
L6	N12°21'40"E	35.00 (RAD)
L7	N07°31'25"W	21.09 (RAD)
L8	N75°05'28"W	5.00 (RAD)
L9	N67°10'38"W	6.08
L10	N11°56'14"W	19.50
L11	N61°53'01"E	2.00 (RAD)
L12	N20°32'03"W	180.00
L13	N20°32'03"W	137.46
L14	N20°32'03"W	42.53
L15	N20°32'03"W	42.14
L16	N20°32'03"W	10.17
L17	N68°30'27"W	44.00 (RAD)

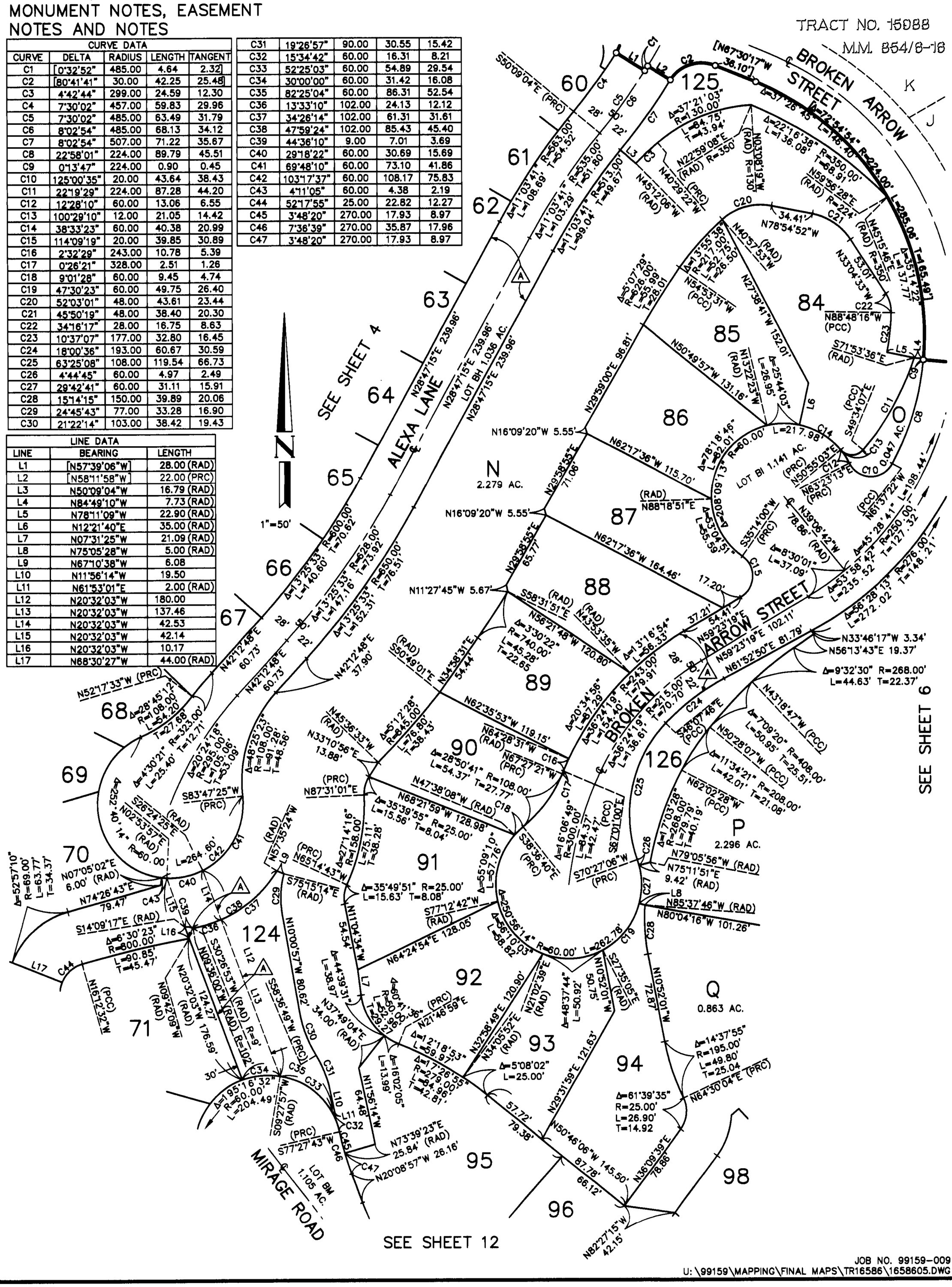

JOB NO. 99159-009
U:\99159\MAPPING\FINAL MAPS\TR16586\1658605.DWG

SHEET 6 OF 16 SHEETS
127 NUMBERED LOTS
34 LETTERED LOTS
101.015 ACRES
A PORTION OF VESTING
T.T.M. 15989
DATE OF SURVEY:
JANUARY, 1999

TRACT MAP NO. 16586

IN THE UNINCORPORATED TERRITORY OF THE COUNTY OF ORANGE,
STATE OF CALIFORNIA

HALL & FOREMAN, INC. STEVEN C. SHAMBECK, P.L.S. 6217

SEPTEMBER, 2003

SEE SHEET 2 FOR BASIS OF BEARINGS, DATUM STATEMENT, MONUMENT NOTES, EASEMENT NOTES AND NOTES
SEE SHEET 16 FOR CURVE DATE AND LINE DATA

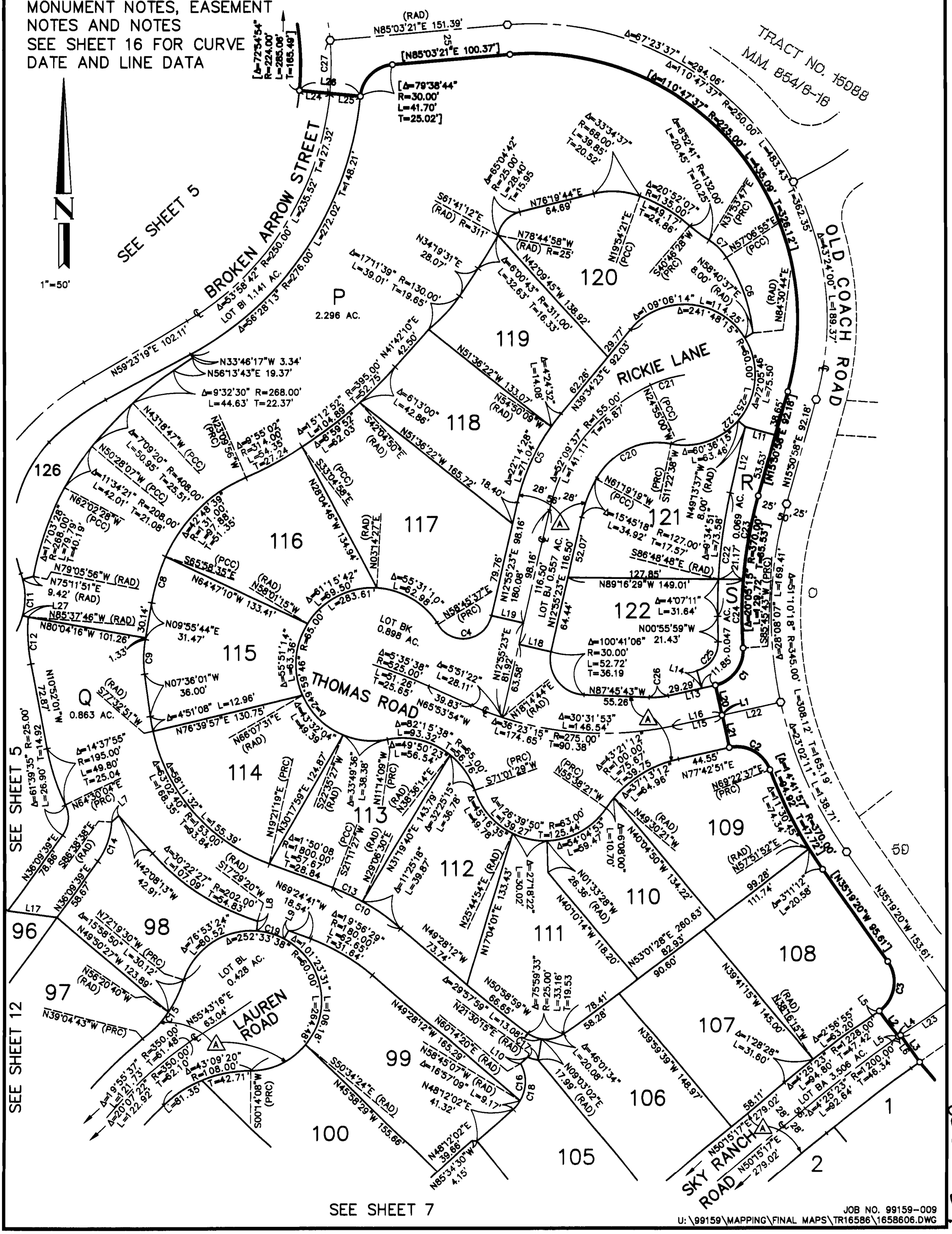

JOB NO. 99159-009
U:\99159\MAPPING\FINAL MAPS\TR16586\1658606.DWG

858 35

SHEET 7 OF 16 SHEETS
127 NUMBERED LOTS
34 LETTERED LOTS
101.015 ACRES
A PORTION OF VESTING
T.T.M. 15989
DATE OF SURVEY:
JANUARY, 1999

TRACT MAP NO. 16586

IN THE UNINCORPORATED TERRITORY OF THE COUNTY OF ORANGE,
STATE OF CALIFORNIA

HALL & FOREMAN, INC. STEVEN C. SHAMBECK, P.L.S. 6217
SEPTEMBER, 2003

SEE SHEET 2 FOR BASIS OF BEARINGS, DATUM STATEMENT, MONUMENT NOTES, EASEMENT NOTES AND NOTES

CURVE DATA				
CURVE	DELTA	RADIUS	LENGTH	TANGENT
C1	12°43'50"	103.00	22.89	11.49
C2	41°49'05"	108.00	78.83	41.26
C3	0°52'35"	528.00	8.08	4.04
C4	0°24'43"	1172.00	8.42	4.21
C5	132°12'22"	27.00	62.30	60.94
C6	4°36'29"	500.00	40.21	20.12
C7	11°15'28"	378.00	74.27	37.26
C8	82°40'39"	30.00	43.29	26.39
C9	0°59'45"	478.00	8.31	4.15
C13	41°21'59"	108.00	77.97	40.77
C14	25°02'05"	322.00	140.69	71.49
C15	79°18'55"	25.00	34.61	20.72
C16	90°00'00"	30.00	47.12	30.00
C17	77°57'42"	31.00	42.18	25.09
C18	61°00'33"	31.00	33.01	18.26
C19	12°26'31"	43.00	9.34	4.69
C20	20°27'29"	108.00	38.56	19.49
C21	9°09'53"	322.00	51.51	25.81
C22	11°28'53"	322.00	64.53	32.37
C23	60°37'05"	25.00	26.45	14.61
C24	4°25'23"	1228.00	94.80	47.42
C25	4°25'23"	1200.00	92.64	46.34
C26	4°25'23"	1172.00	90.47	45.26

LINE DATA		
LINE	BEARING	LENGTH
L1	N33°17'27"W	5.07
L2	N33°17'27"W	4.44
L4	N14°42'38"W	26.79
L5	N48°12'02"E	8.00
L6	N54°40'40"E	6.92
L7	[N54°40'40"E	2.15]
L8	N54°40'40"E	9.07
L9	N54°40'40"E	9.07
L10	N52°05'05"W	16.22 (RAD)
L11	N56°42'33"E	28.00
L12	N56°42'33"E	22.00
L13	N75°17'22"E	26.00(RAD)

JOB NO. 99159-009
U:\99159\MAPPING\FINAL MAPS\TR16586\1658607.DWG

858 35

858 36

SHEET 8 OF 16 SHEETS
127 NUMBERED LOTS
34 LETTERED LOTS
101.015 ACRES
A PORTION OF VESTING
T.T.M. 15989
DATE OF SURVEY:
JANUARY, 1999

TRACT MAP NO. 16586

IN THE UNINCORPORATED TERRITORY OF THE COUNTY OF ORANGE,
STATE OF CALIFORNIA

HALL & FOREMAN, INC.

STEVEN C. SHAMBECK, P.L.S. 6217
SEPTEMBER, 2003

SEE SHEET 2 FOR BASIS OF BEARINGS, DATUM STATEMENT, MONUMENT NOTES, EASEMENT NOTES AND NOTES

CURVE DATA				
CURVE	DELTA	RADIUS	LENGTH	TANGENT
C1	6°10'13"	108.00	11.63	5.82
C2	11°51'04"	49.00	10.14	5.09
C3	24°19'14"	30.00	12.73	6.46
C4	87°07'19"	30.00	45.62	28.53
C5	95°36'02"	30.00	50.06	33.09
C6	14°28'43"	230.00	58.12	29.22
C7	15°22'22"	255.00	68.42	34.42
C8	15°22'22"	280.00	75.13	37.79
C9	80°20'36"	30.00	42.07	25.33
C10	79°13'00"	30.00	41.48	24.83
C11	10°37'17"	418.00	77.49	38.85
C12	10°37'17"	390.00	72.30	36.25
C13	2°52'41"	250.00	12.56	6.28
C14	4°42'23"	250.00	20.54	10.27

LINE DATA		
LINE	BEARING	LENGTH
L1	N09°01'36"W	30.69
L2	N78°10'03"E	30.00 (RAD)
L3	N79°59'45"E	30.00 (RAD)
L4	N01°35'41"E	49.97
L5	N88°24'19"W	28.00 (RAD)
L6	N88°24'19"W	22.00 (RAD)

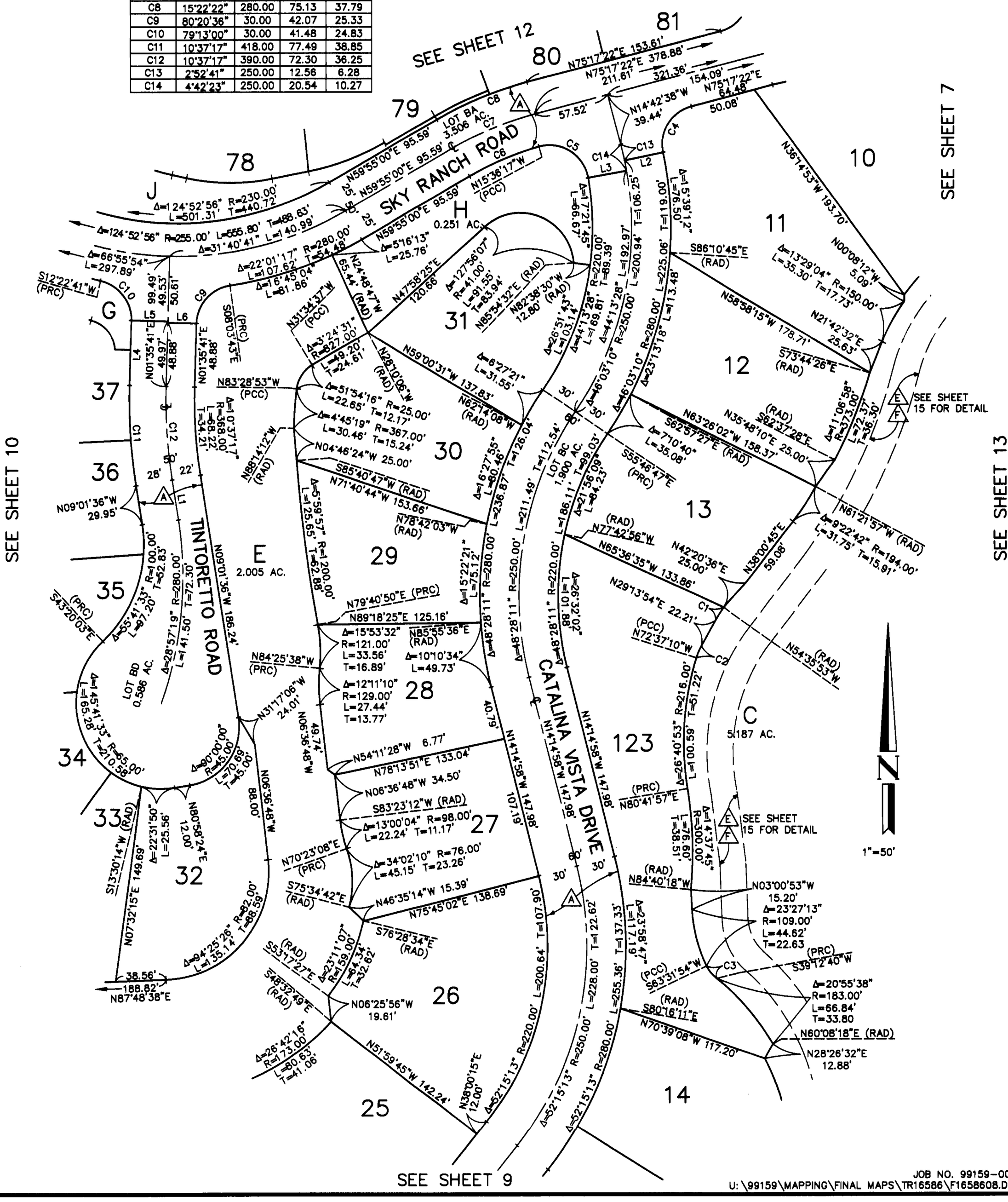

JOB NO. 99159-009
U:\99159\MAPPING\FINAL MAPS\TR16586\F1658608.DWG

858 36

858 37

858 37

SHEET 9 OF 16 SHEETS
127 NUMBERED LOTS
34 LETTERED LOTS
101.015 ACRES
A PORTION OF VESTING
T.T.M. 15989
DATE OF SURVEY:
JANUARY, 1999

TRACT MAP NO. 16586

IN THE UNINCORPORATED TERRITORY OF THE COUNTY OF ORANGE,
STATE OF CALIFORNIA

HALL & FOREMAN, INC. STEVEN C. SHAMBECK, P.L.S. 6217
SEPTEMBER, 2003

SEE SHEET 2 FOR BASIS OF BEARINGS, DATUM STATEMENT, MONUMENT NOTES, EASEMENT NOTES AND NOTES

CURVE DATA				
CURVE	DELTA	RADIUS	LENGTH	TANGENT
C1	20°29'40"	200.00	71.54	36.16
C2	17°36'26"	77.00	23.66	11.93
C3	13°05'28"	91.00	20.79	10.44

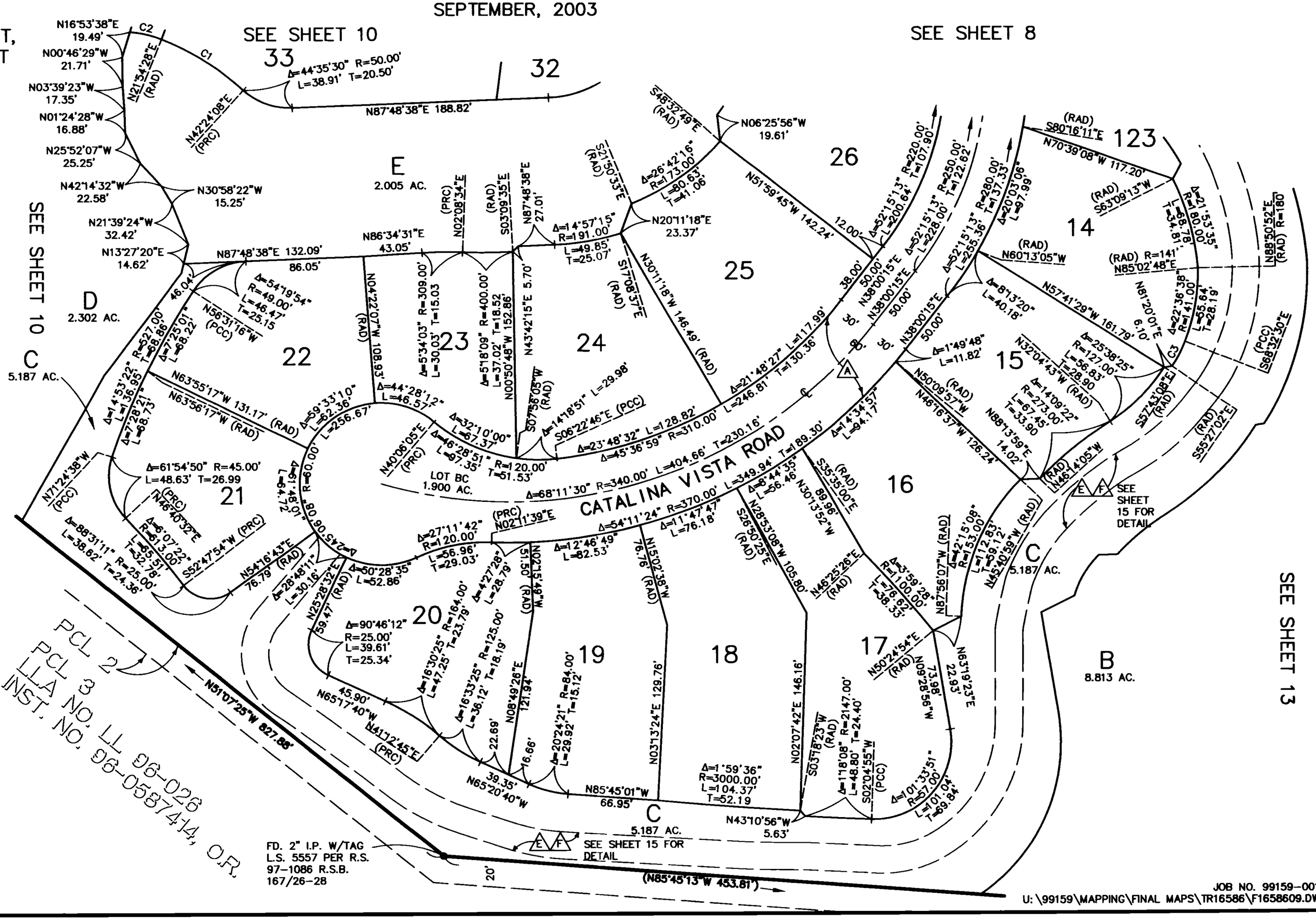

JOB NO. 99159-001
U:\99159\MAPPING\FINAL MAPS\TR16586\F1658609.DWG

SHEET 10 OF 16 SHEETS
127 NUMBERED LOTS
34 LETTERED LOTS
101.015 ACRES
A PORTION OF VESTING
T.T.M. 15989
DATE OF SURVEY:
JANUARY, 1999

TRACT MAP NO. 16586

IN THE UNINCORPORATED TERRITORY OF THE COUNTY OF ORANGE,
STATE OF CALIFORNIA

HALL & FOREMAN, INC. STEVEN C. SHAMBECK, P.L.S. 6217
SEPTEMBER, 2003

SEE SHEET 2 FOR BASIS OF BEARINGS, DATUM STATEMENT, MONUMENT NOTES, EASEMENT NOTES AND NOTES

SEE SHEET 11

SEE SHEET 14

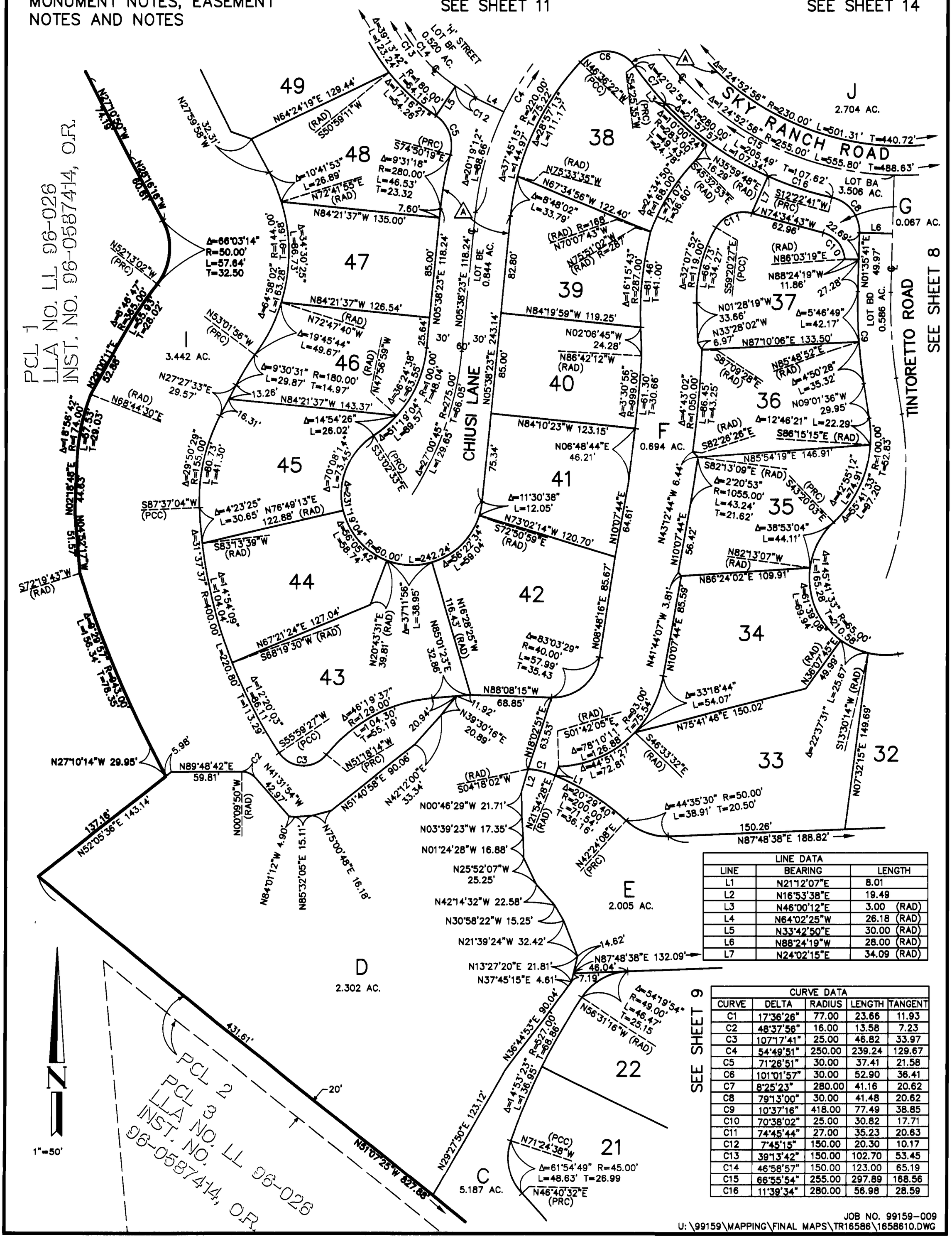

LINE DATA		
LINE	BEARING	LENGTH
L1	N21°12'07"E	8.01
L2	N16°53'38"E	19.49
L3	N46°00'12"E	3.00 (RAD)
L4	N64°02'25"W	26.18 (RAD)
L5	N33°42'50"E	30.00 (RAD)
L6	N88°24'19"W	28.00 (RAD)
L7	N24°02'15"E	34.09 (RAD)

CURVE DATA				
CURVE	DELTA	RADIUS	LENGTH	TANGENT
C1	17°36'26"	77.00	23.66	11.93
C2	48°37'56"	16.00	13.58	7.23
C3	107°17'41"	25.00	46.82	33.97
C4	54°49'51"	250.00	239.24	129.67
C5	71°26'51"	30.00	37.41	21.58
C6	101°01'57"	30.00	52.90	36.41
C7	8°25'23"	280.00	41.16	20.62
C8	79°13'00"	30.00	41.48	20.62
C9	10°37'16"	418.00	77.49	38.85
C10	70°38'02"	25.00	30.82	17.71
C11	74°45'44"	27.00	35.23	20.63
C12	7°45'15"	150.00	20.30	10.17
C13	39°13'42"	150.00	102.70	53.45
C14	46°58'57"	150.00	123.00	65.19
C15	66°55'54"	255.00	297.89	168.56
C16	11°39'34"	280.00	56.98	28.59

JOB NO. 99159-009
U:\99159\MAPPING\FINAL MAPS\TR16586\1658610.DWG

SHEET 11 OF 16 SHEETS
127 NUMBERED LOTS
34 LETTERED LOTS
101.015 ACRES
A PORTION OF VESTING
T.T.M. 15989
DATE OF SURVEY:
JANUARY, 1999

TRACT MAP NO. 16586

IN THE UNINCORPORATED TERRITORY OF THE COUNTY OF ORANGE,
STATE OF CALIFORNIA

HALL & FOREMAN, INC.

STEVEN C. SHAMBECK, P.L.S. 6217
SEPTEMBER, 2003

SEE SHEET 2 FOR BASIS OF BEARINGS, DATUM STATEMENT, MONUMENT NOTES, EASEMENT NOTES AND NOTES

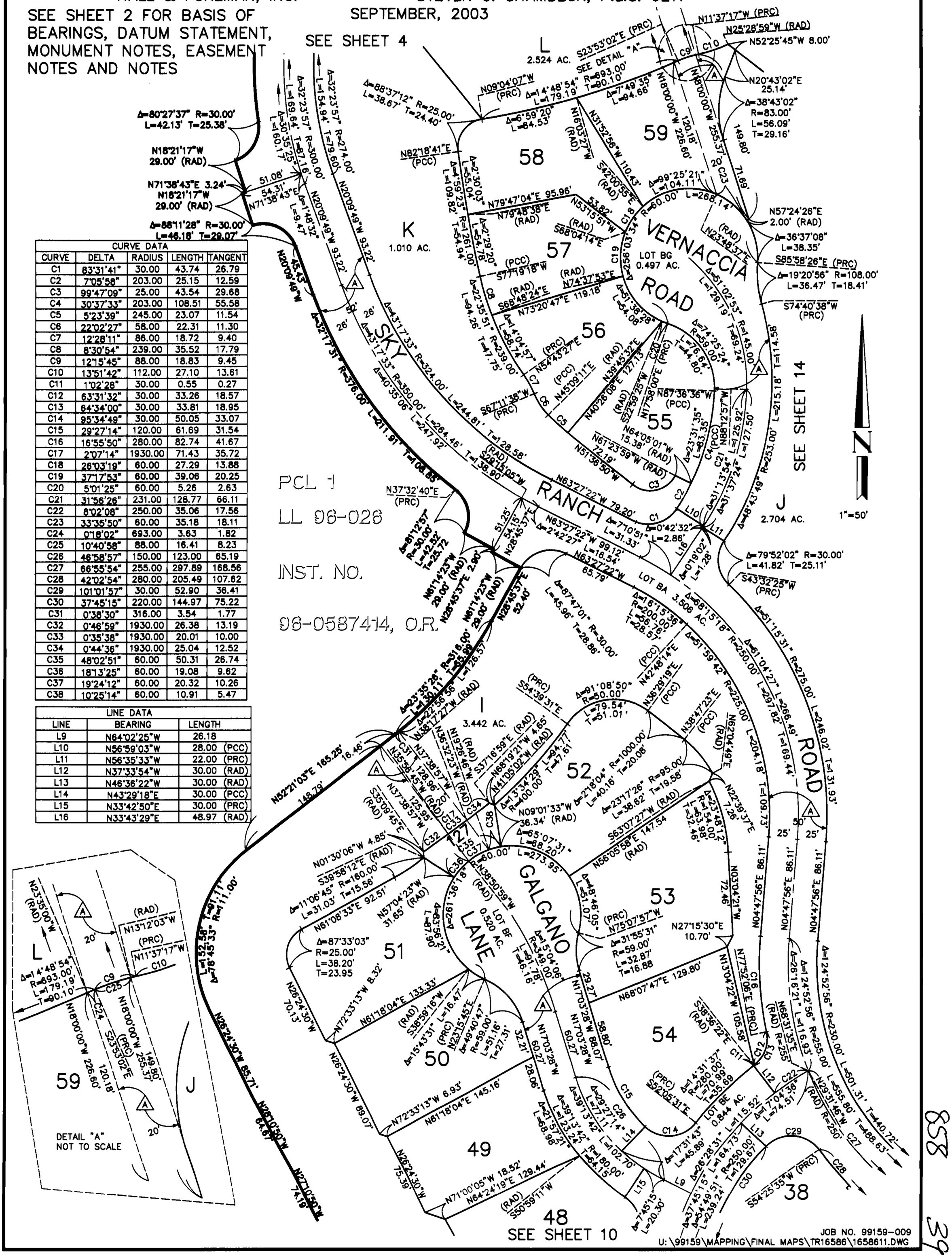

CURVE DATA				
CURVE	DELTA	RADIUS	LENGTH	TANGENT
C1	83°31'41"	30.00	43.74	26.79
C2	7°05'58"	203.00	25.15	12.59
C3	99°47'09"	25.00	43.54	29.68
C4	30°37'33"	203.00	108.51	55.58
C5	5°23'39"	245.00	23.07	11.54
C6	22°02'27"	58.00	22.31	11.30
C7	12°28'11"	86.00	18.72	9.40
C8	8°30'54"	239.00	35.52	17.79
C9	12°15'45"	88.00	18.83	9.45
C10	13°51'42"	112.00	27.10	13.61
C11	1°02'28"	30.00	0.55	0.27
C12	63°31'32"	30.00	33.26	18.57
C13	64°34'00"	30.00	33.81	18.95
C14	95°34'49"	30.00	50.05	33.07
C15	29°27'14"	120.00	61.69	31.54
C16	16°55'50"	280.00	82.74	41.67
C17	2°07'14"	1930.00	71.43	35.72
C18	26°03'19"	60.00	27.29	13.88
C19	37°17'53"	60.00	39.06	20.25
C20	5°01'25"	60.00	5.26	2.63
C21	31°56'26"	231.00	128.77	66.11
C22	8°02'08"	250.00	35.06	17.56
C23	33°35'50"	60.00	35.18	18.11
C24	0°18'02"	693.00	3.63	1.82
C25	10°40'58"	88.00	16.41	8.23
C26	46°58'57"	150.00	123.00	65.19
C27	66°55'54"	255.00	297.89	168.56
C28	42°02'54"	280.00	205.49	107.62
C29	101°01'57"	30.00	52.90	36.41
C30	37°45'15"	220.00	144.97	75.22
C31	0°38'30"	316.00	3.54	1.77
C32	0°46'59"	1930.00	26.38	13.19
C33	0°35'38"	1930.00	20.01	10.00
C34	0°44'36"	1930.00	25.04	12.52
C35	48°02'51"	60.00	50.31	26.74
C36	18°13'25"	60.00	19.08	9.62
C37	19°24'12"	60.00	20.32	10.26
C38	10°25'14"	60.00	10.91	5.47

LINE DATA		
LINE	BEARING	LENGTH
L9	N64°02'25"W	26.18
L10	N56°59'03"W	28.00 (PCC)
L11	N56°35'33"W	22.00 (PRC)
L12	N37°33'54"W	30.00 (RAD)
L13	N46°36'22"W	30.00 (RAD)
L14	N43°29'18"E	30.00 (PCC)
L15	N33°42'50"E	30.00 (PRC)
L16	N33°43'29"E	48.97 (RAD)

SHEET 12 OF 16 SHEETS
127 NUMBERED LOTS
34 LETTERED LOTS
101.015 ACRES
A PORTION OF VESTING
T.T.M. 15989
DATE OF SURVEY:
JANUARY, 1999

TRACT MAP NO. 16586

IN THE UNINCORPORATED TERRITORY OF THE COUNTY OF ORANGE,
STATE OF CALIFORNIA

HALL & FOREMAN, INC. STEVEN C. SHAMBECK, P.L.S. 6217

SEPTEMBER, 2003

SEE SHEET 2 FOR BASIS OF BEARINGS, DATUM STATEMENT, MONUMENT NOTES, EASEMENT NOTES AND NOTES

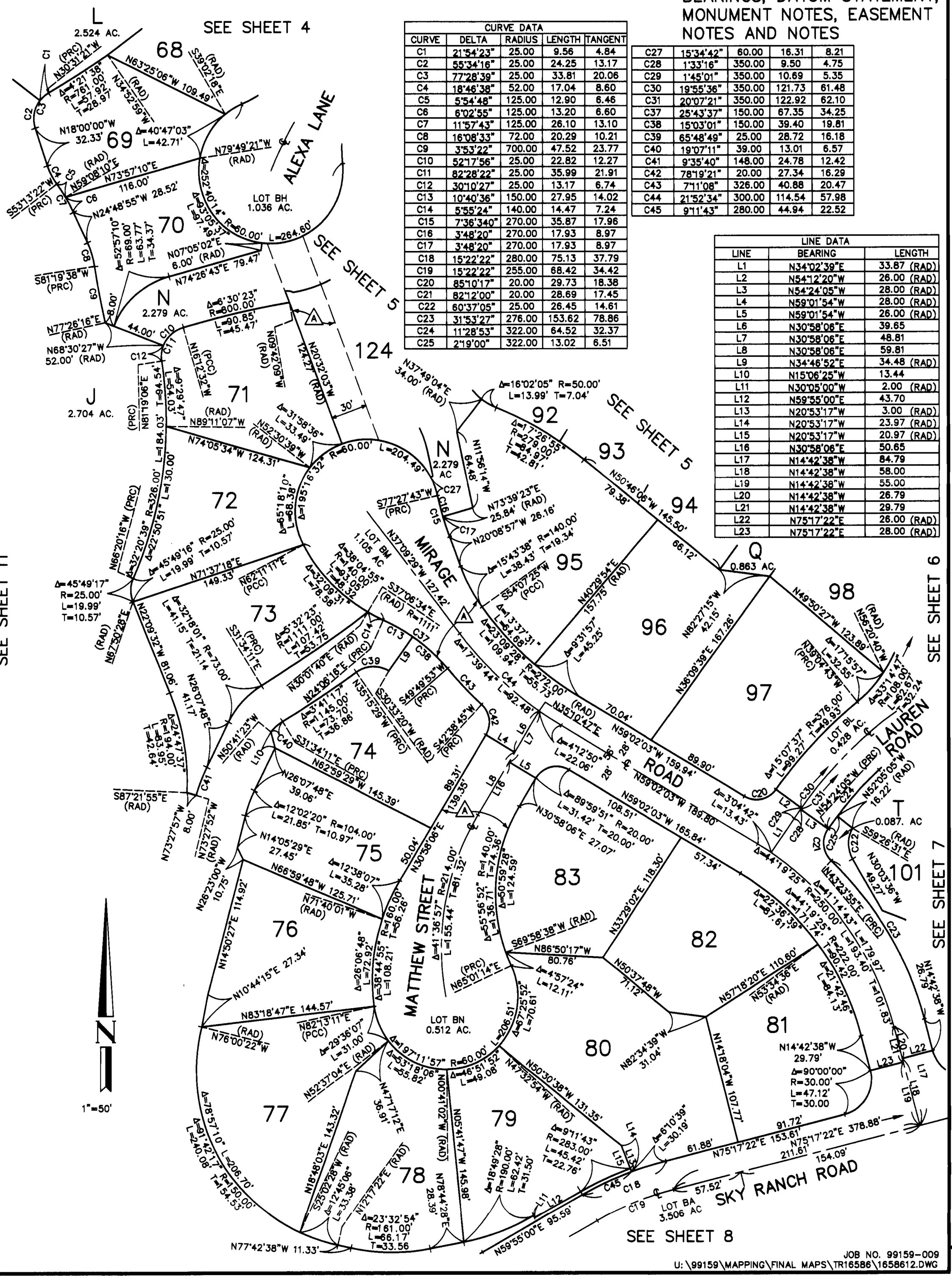

CURVE DATA				
CURVE	DELTA	RADIUS	LENGTH	TANGENT
C1	21°54'23"	25.00	9.56	4.84
C2	55°34'16"	25.00	24.25	13.17
C3	77°28'39"	25.00	33.81	20.06
C4	18°46'38"	52.00	17.04	8.60
C5	5°54'48"	125.00	12.90	6.46
C6	6°02'55"	125.00	13.20	6.60
C7	11°57'43"	125.00	26.10	13.10
C8	16°08'33"	72.00	20.29	10.21
C9	3°53'22"	700.00	47.52	23.77
C10	52°17'56"	25.00	22.82	12.27
C11	82°28'22"	25.00	35.99	21.91
C12	30°10'27"	25.00	13.17	6.74
C13	10°40'36"	150.00	27.95	14.02
C14	5°55'24"	140.00	14.47	7.24
C15	7°36'340"	270.00	35.87	17.96
C16	3°48'20"	270.00	17.93	8.97
C17	3°48'20"	270.00	17.93	8.97
C18	15°22'22"	280.00	75.13	37.79
C19	15°22'22"	255.00	68.42	34.42
C20	85°10'17"	20.00	29.73	18.38
C21	82°12'00"	20.00	28.69	17.45
C22	60°37'05"	25.00	26.45	14.61
C23	31°53'27"	276.00	153.62	78.86
C24	11°28'53"	322.00	64.52	32.37
C25	2°19'00"	322.00	13.02	6.51
C27	15°34'42"	60.00	16.31	8.21
C28	1°33'16"	350.00	9.50	4.75
C29	1°45'01"	350.00	10.69	5.35
C30	19°55'36"	350.00	121.73	61.48
C31	20°07'21"	350.00	122.92	62.10
C37	25°43'37"	150.00	67.35	34.25
C38	15°03'01"	150.00	39.40	19.81
C39	65°48'49"	25.00	28.72	16.18
C40	19°07'11"	39.00	13.01	6.57
C41	9°35'40"	148.00	24.78	12.42
C42	78°19'21"	20.00	27.34	16.29
C43	7°11'08"	326.00	40.88	20.47
C44	21°52'34"	300.00	114.54	57.98
C45	9°11'43"	280.00	44.94	22.52

LINE DATA		
LINE	BEARING	LENGTH
L1	N34°02'39"E	33.87 (RAD)
L2	N54°12'20"W	26.00 (RAD)
L3	N54°24'05"W	28.00 (RAD)
L4	N59°01'54"W	28.00 (RAD)
L5	N59°01'54"W	26.00 (RAD)
L6	N30°58'06"E	39.65
L7	N30°58'06"E	48.81
L8	N30°58'06"E	59.81
L9	N34°46'52"E	34.48 (RAD)
L10	N15°06'25"W	13.44
L11	N30°05'00"W	2.00 (RAD)
L12	N59°55'00"E	43.70
L13	N20°53'17"W	3.00 (RAD)
L14	N20°53'17"W	23.97 (RAD)
L15	N20°53'17"W	20.97 (RAD)
L16	N30°58'06"E	50.65
L17	N14°42'38"W	84.79
L18	N14°42'38"W	58.00
L19	N14°42'38"W	55.00
L20	N14°42'38"W	26.79
L21	N14°42'38"W	29.79
L22	N75°17'22"E	26.00 (RAD)
L23	N75°17'22"E	28.00 (RAD)

JOB NO. 99159-009
U:\99159\MAPPING\FINAL MAPS\TR16586\1658612.DWG

858 41

41

858

SHEET 13 OF 16 SHEETS
127 NUMBERED LOTS
34 LETTERED LOTS
101.015 ACRES
A PORTION OF VESTING
T.T.M. 15989
DATE OF SURVEY:
JANUARY, 1999

TRACT MAP NO. 16586

IN THE UNINCORPORATED TERRITORY OF THE COUNTY OF ORANGE,
STATE OF CALIFORNIA

HALL & FOREMAN, INC. STEVEN C. SHAMBECK, P.L.S. 6217
SEPTEMBER, 2003

SEE SHEET 2 FOR BASIS OF BEARINGS, DATUM STATEMENT, MONUMENT NOTES, EASEMENT NOTES AND NOTES

CURVE DATA				
CURVE	DELTA	RADIUS	LENGTH	TANGENT
C1	3°59'26"	350.00	24.38	12.19
C2	66°51'00"	103.00	120.18	67.98
C3	70°42'21"	32.00	39.49	22.70
C4	27°00'00"	82.00	38.64	19.69
C5	5°15'52"	702.00	64.50	32.27
C6	126°24'31"	25.00	55.16	49.50
C9	132°12'22"	27.00	62.30	60.94
C10	19°23'56"	217.00	73.47	37.09
C11	26°52'02"	158.00	74.09	37.74
C12	14°18'27"	153.00	38.21	19.20
C13	94°42'06"	70.00	115.70	75.99
C14	13°29'04"	150.00	35.30	17.73
C15	11°06'58"	373.00	72.37	36.30
C16	9°22'42"	194.00	31.75	15.91
C17	6°10'14"	108.00	11.63	5.82
C18	24°19'14"	30.00	12.73	6.46
C19	20°55'38"	183.00	66.84	33.80
C20	21°53'35"	180.00	68.78	34.81
C21	22°36'38"	141.00	55.64	28.19
C22	13°05'28"	91.00	20.79	10.44
C23	25°38'25"	127.00	56.83	28.90
C24	14°09'22"	273.00	67.45	33.90
C25	101°33'51"	57.00	101.04	69.84
C26	1°18'08"	2147.00	48.80	24.40
C27	16°33'25"	125.00	36.12	18.19
C28	16°30'25"	164.00	47.25	23.79
C29	88°31'11"	25.00	38.62	24.36
C30	6°07'22"	613.00	65.51	32.78
C31	61°54'50"	45.00	48.63	26.99
C32	14°53'22"	527.00	136.95	68.86
C33	27°50'51"	73.00	35.48	18.10
C34	14°23'00"	193.00	48.45	24.35
C35	25°38'25"	207.00	92.63	47.11
C36	12°01'11"	171.00	35.87	18.00
C37	23°18'46"	221.00	89.92	45.59
C38	18°47'59"	260.00	85.31	43.04
C39	17°56'20"	263.00	82.34	41.51
C40	8°14'24"	29.00	4.17	2.09
C41	13°41'52"	380.00	90.85	45.64
C42	25°23'40"	136.00	60.28	30.64
C43	11°51'04"	49.00	10.14	5.09
C44	13°29'04"	70.00	16.47	8.28
C45	12°39'55"	73.00	16.14	8.10
C46	46°34'41"	50.00	40.65	21.52
C47	27°00'00"	162.00	76.34	38.89
C48	66°51'00"	23.00	26.84	15.18
C49	3°59'26"	430.00	29.95	14.98

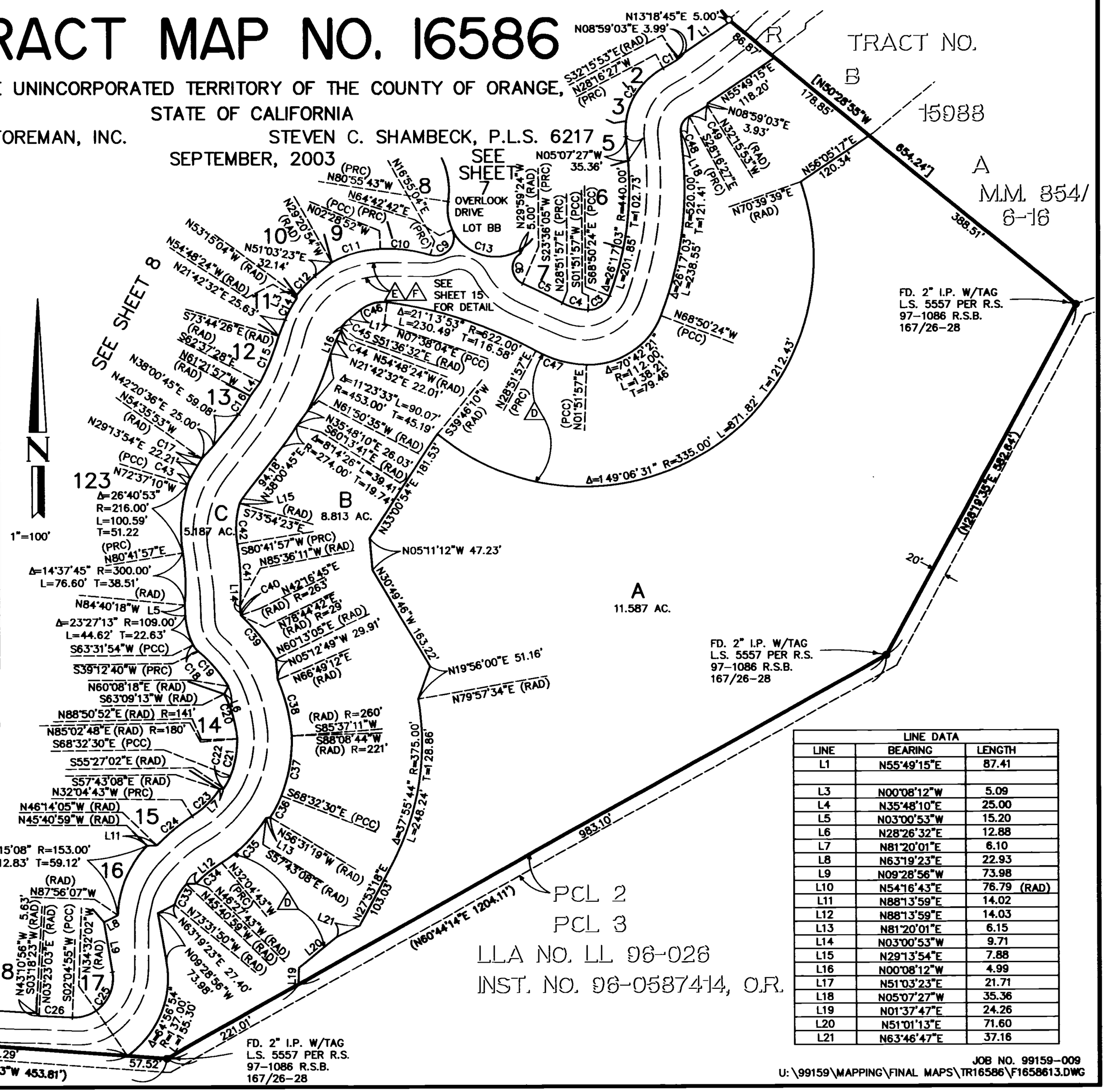

LINE DATA		
LINE	BEARING	LENGTH
L1	N55°49'15"E	87.41
L3	N00°08'12"W	5.09
L4	N35°48'10"E	25.00
L5	N03°00'53"W	15.20
L6	N28°26'32"E	12.88
L7	N81°20'01"E	6.10
L8	N63°19'23"E	22.93
L9	N09°28'56"W	73.98
L10	N54°16'43"E	76.79 (RAD)
L11	N88°13'59"E	14.02
L12	N88°13'59"E	14.03
L13	N81°20'01"E	6.15
L14	N03°00'53"W	9.71
L15	N29°13'54"E	7.88
L16	N00°08'12"W	4.99
L17	N51°03'23"E	21.71
L18	N05°07'27"W	35.36
L19	N01°37'47"E	24.26
L20	N51°01'13"E	71.60
L21	N63°46'47"E	37.16

JOB NO. 99159-009
U:\99159\MAPPING\FINAL MAPS\TR16586\F1658613.DWG

SHEET 14 OF 16 SHEETS
127 NUMBERED LOTS
34 LETTERED LOTS
101.015 ACRES
A PORTION OF VESTING
T.T.M. 15989
DATE OF SURVEY:
JANUARY, 1999

TRACT MAP NO. 16586

IN THE UNINCORPORATED TERRITORY OF THE COUNTY OF ORANGE,
STATE OF CALIFORNIA

HALL & FOREMAN, INC. STEVEN C. SHAMBECK, P.L.S. 6217

SEPTEMBER, 2003

SEE SHEET 2 FOR BASIS OF BEARINGS, DATUM STATEMENT, MONUMENT NOTES, EASEMENT NOTES AND NOTES

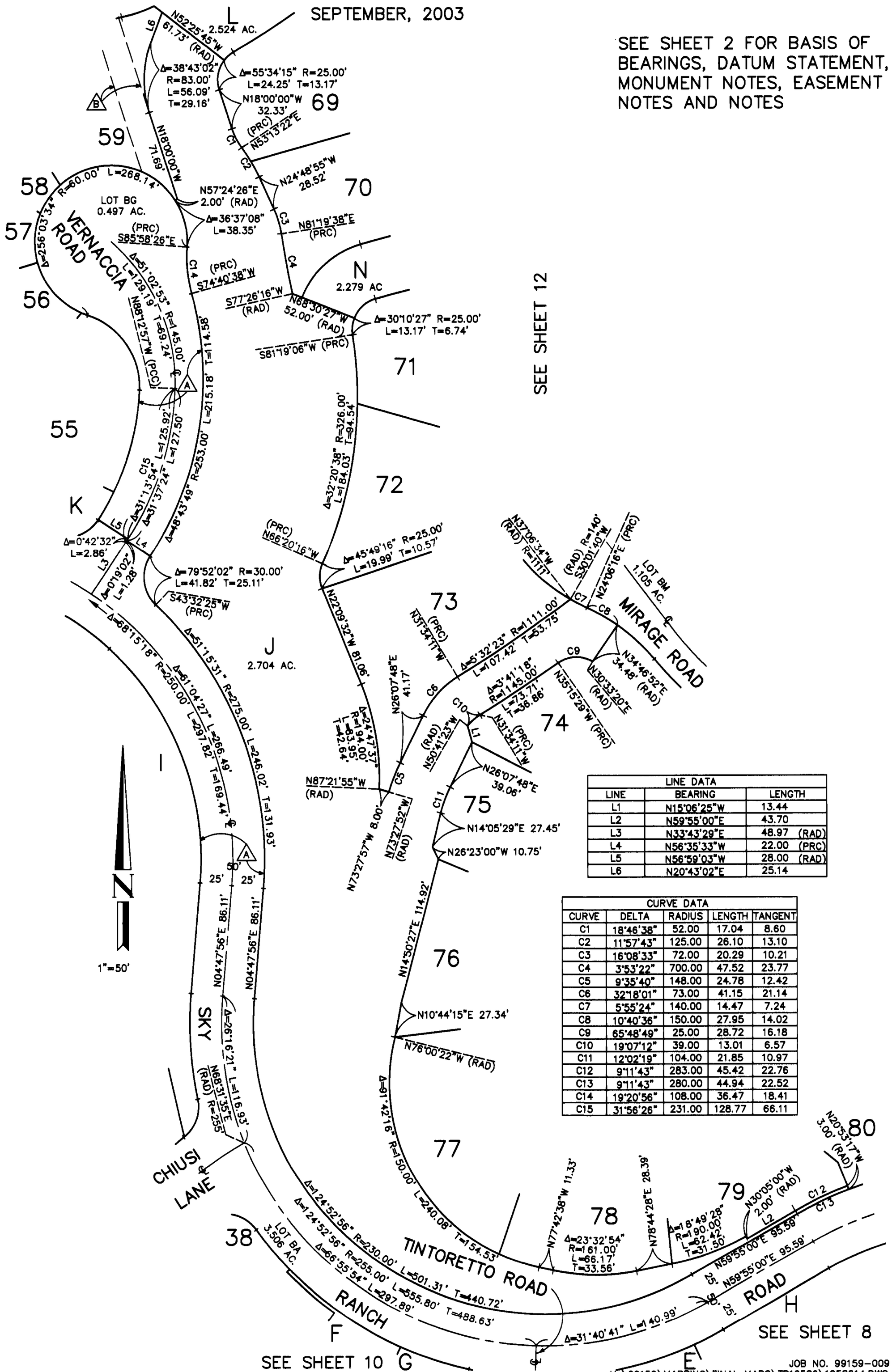

LINE DATA			
LINE	BEARING	LENGTH	
L1	N15°06'25"W	13.44	
L2	N59°55'00"E	43.70	
L3	N33°43'29"E	48.97	(RAD)
L4	N56°35'33"W	22.00	(PRC)
L5	N56°59'03"W	28.00	(RAD)
L6	N20°43'02"E	25.14	

CURVE DATA				
CURVE	DELTA	RADIUS	LENGTH	TANGENT
C1	18°46'38"	52.00	17.04	8.60
C2	11°57'43"	125.00	26.10	13.10
C3	16°08'33"	72.00	20.29	10.21
C4	3°53'22"	700.00	47.52	23.77
C5	9°35'40"	148.00	24.78	12.42
C6	32°18'01"	73.00	41.15	21.14
C7	5°55'24"	140.00	14.47	7.24
C8	10°40'36"	150.00	27.95	14.02
C9	65°48'49"	25.00	28.72	16.18
C10	19°07'12"	39.00	13.01	6.57
C11	12°02'19"	104.00	21.85	10.97
C12	9°11'43"	283.00	45.42	22.76
C13	9°11'43"	280.00	44.94	22.52
C14	19°20'56"	108.00	36.47	18.41
C15	31°56'26"	231.00	128.77	66.11

JOB NO. 99159-009
U:\99159\MAPPING\FINAL MAPS\TR16586\1658614.DWG

858 43

43 858

SHEET 15 OF 16 SHEETS
127 NUMBERED LOTS
34 LETTERED LOTS
101.015 ACRES
A PORTION OF VESTING
T.T.M. 15989
DATE OF SURVEY:
JANUARY, 1999

TRACT MAP NO. 16586

IN THE UNINCORPORATED TERRITORY OF THE COUNTY OF ORANGE,
STATE OF CALIFORNIA

HALL & FOREMAN, INC. STEVEN C. SHAMBECK, P.L.S. 6217
SEPTEMBER, 2003

TRACT NO. 15988
M.M. 854/6-16

EASEMENT DETAIL SHEET

SEE SHEET 2 FOR BASIS OF BEARINGS, DATUM STATEMENT, MONUMENT NOTES, EASEMENT NOTES AND NOTES

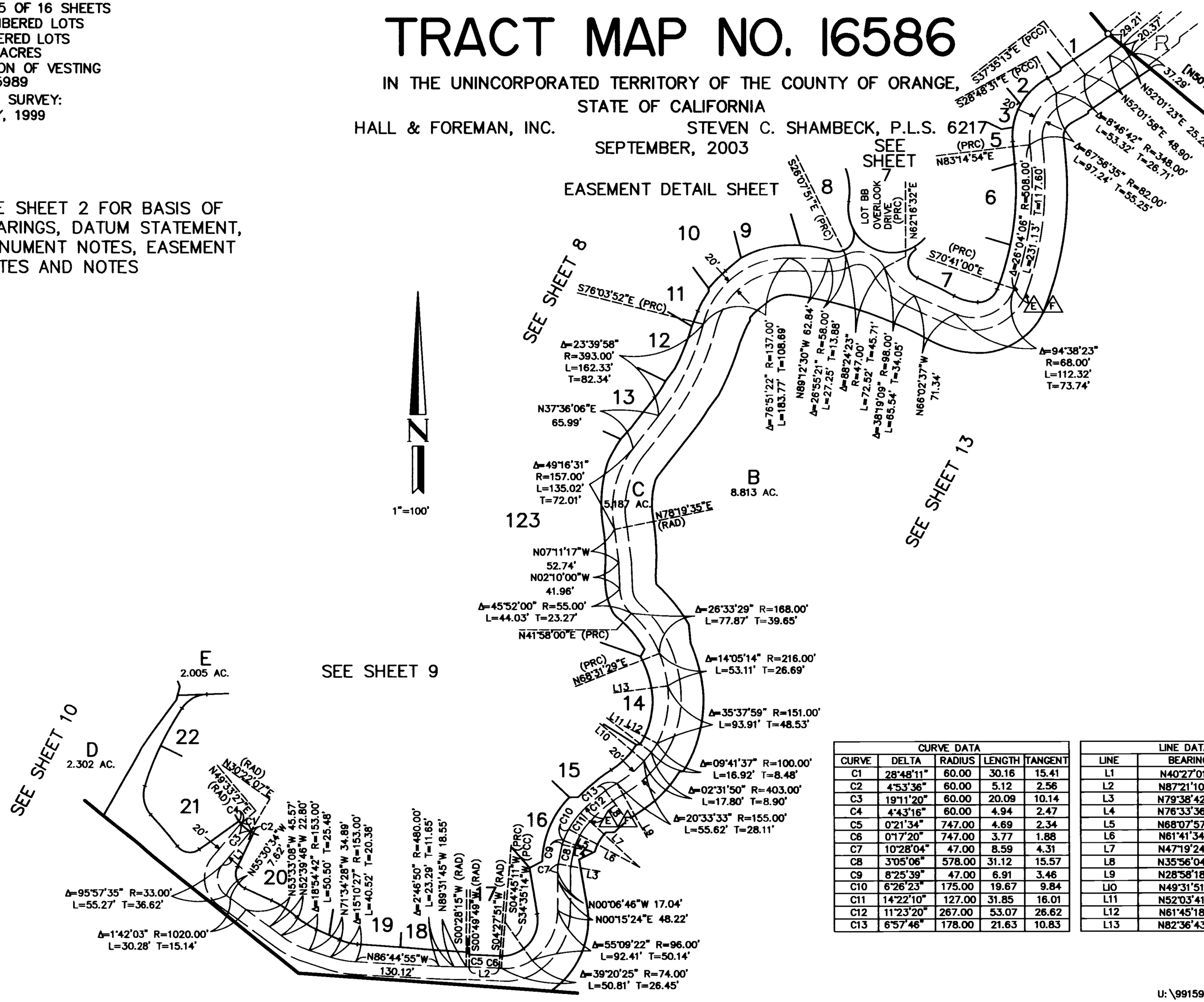

CURVE DATA				
CURVE	DELTA	RADIUS	LENGTH	TANGENT
C1	28°48'11"	60.00	30.16	15.41
C2	4°53'36"	60.00	5.12	2.56
C3	19°11'20"	60.00	20.09	10.14
C4	4°43'16"	60.00	4.94	2.47
C5	0°21'34"	747.00	4.69	2.34
C6	0°17'20"	747.00	3.77	1.88
C7	10°28'04"	47.00	8.59	4.31
C8	3°05'06"	578.00	31.12	15.57
C9	8°25'39"	47.00	6.91	3.46
C10	6°26'23"	175.00	19.67	9.84
C11	14°22'10"	127.00	31.85	16.01
C12	11°23'20"	267.00	53.07	26.62
C13	6°57'46"	178.00	21.63	10.83

LINE DATA		
LINE	BEARING	LENGTH
L1	N40°27'01"E	68.99
L2	N87°21'10"W	47.37
L3	N79°38'42"W	(PCC)
L4	N76°33'36"W	(PCC)
L5	N68°07'57"W	(RAD)
L6	N61°41'34"W	(PCC)
L7	N47°19'24"W	(PCC)
L8	N35°56'04"W	(PCC)
L9	N28°58'18"W	(PRC)
L10	N49°31'51"W	(PCC)
L11	N52°03'41"W	(PCC)
L12	N61°45'18"W	(PCC)
L13	N82°36'43"W	(PCC)

JOB NO. 99159-009
U:\99159\MAPPING\FINAL MAPS\TR16586\F1658615.DWG

SHEET 16 OF 16 SHEETS
127 NUMBERED LOTS
34 LETTERED LOTS
101.015 ACRES
A PORTION OF VESTING
T.T.M. 15989
DATE OF SURVEY:
JANUARY, 1999

TRACT MAP NO. 16586

IN THE UNINCORPORATED TERRITORY OF THE COUNTY OF ORANGE,
STATE OF CALIFORNIA

HALL & FOREMAN, INC. STEVEN C. SHAMBECK, P.L.S. 6217
SEPTEMBER, 2003

SEE SHEET 2 FOR BASIS OF BEARINGS, DATUM STATEMENT, MONUMENT NOTES, EASEMENT NOTES AND NOTES

CURVE AND LINE DATA FOR SHEET 6

LINE DATA		
LINE	BEARING	LENGTH
L1	N77°42'51"E	0.29
L2	N35°19'20"W	28.00 (RAD)
L3	N35°19'20"W	28.00
L4	N54°40'40"E	2.15
L5	N54°40'40"E	6.92
L6	N54°40'40"E	9.07
L7	N47°51'47"E	8.00
L8	N04°33'54"E	8.00 (RAD)
L9	N28°02'05"E	8.00 (RAD)
L10	N48°12'02"E	8.00
L11	N74°09'02"W	26.68
L12	N12°46'03"E	57.49
L13	N77°42'51"E	41.14
L14	N15°51'12"W	15.46 (RAD)
L15	N77°42'51"E	43.31
L16	N77°42'51"E	43.02
L17	N82°27'15"W	42.15
L18	N77°04'37"W	28.00
L19	N77°04'37"W	28.00
L20	N12°17'09"W	26.00 (RAD)
L21	N12°17'09"W	28.00 (RAD)
L22	N77°42'51"E	50.77 (RAD)
L23	N54°40'40"E	52.85
L24	N84°35'23"W	26.00 (RAD)
L25	N84°35'23"W	26.00 (RAD)
L26	N84°35'23"W	52.00 (RAD)
L27	N75°05'28"W	5.00 (RAD)

CURVE DATA				
CURVE	DELTA	RADIUS	LENGTH	TANGENT
C1	81°57'08"	30.00	42.91	26.06
C2	81°39'46"	30.00	42.76	25.92
C3	90°00'00"	30.00	47.12	30.00
C4	135°50'14"	25.00	59.27	61.63
C5	26°39'00"	183.00	85.12	43.34
C6	27°23'49"	143.00	68.38	34.86
C7	25°13'08"	48.00	21.13	10.74
C8	14°05'41"	165.00	40.59	20.40
C9	17°31'45"	97.00	29.68	14.96
C10	19°20'21"	200.00	67.51	34.08
C11	29°42'41"	60.00	31.11	15.91
C12	15°14'15"	150.00	39.89	20.06
C13	7°55'03"	200.00	27.64	13.84
C14	32°48'17"	62.00	35.50	18.25
C15	33°14'47"	108.00	62.67	32.24
C16	61°00'33"	31.00	33.01	18.26
C17	12°26'31"	43.00	9.34	4.69
C18	77°57'42"	31.00	42.18	25.09
C19	23°28'11"	60.00	24.58	12.46
C20	72°41'57"	59.00	74.86	43.42
C21	16°29'12"	106.00	30.50	15.36
C22	13°42'03"	440.00	105.21	52.86
C23	11°05'13"	370.00	71.60	35.91
C24	9°00'02"	370.00	58.12	29.12
C25	75°04'47"	25.00	32.76	19.21
C26	14°31'26"	64.00	16.22	8.16
C27	10°21'16"	250.00	45.18	22.65

858 44